SPECIAL ISSUE

THE KENYA GAZETTE

Published by Authority of the Republic of Kenya

(Registered as a Newspaper at the G.P.O.)

Vol. CXXVII—No. 73 **NAIROBI, 16th April, 2025** **Price Sh. 60**

GAZETTE NOTICE NO. 4832

THE PETROLEUM ACT

(*Cap*. 308)

CONSTITUTION OF PETROLEUM BLOCKS

IN EXERCISE of the powers conferred by section 15 (1) of the Petroleum Act, the Cabinet Secretary for Energy and Petroleum in consultation with the Advisory Committee constitutes the petroleum blocks as set out in the First Schedule and as further specified in the geographical coordinates in the respective basin block maps in the Second Schedule consisting of, six blocks located in the Anza Basin, twenty-nine blocks located in the Lamu Basin, three blocks in the Mandera Basin and twelve blocks located in the Tertiary Rift Basin. Gazette Notice No. 3344 of 2016 is revoked.

FIRST SCHEDULE

KENYA PETROLEUM BLOCKS MAP

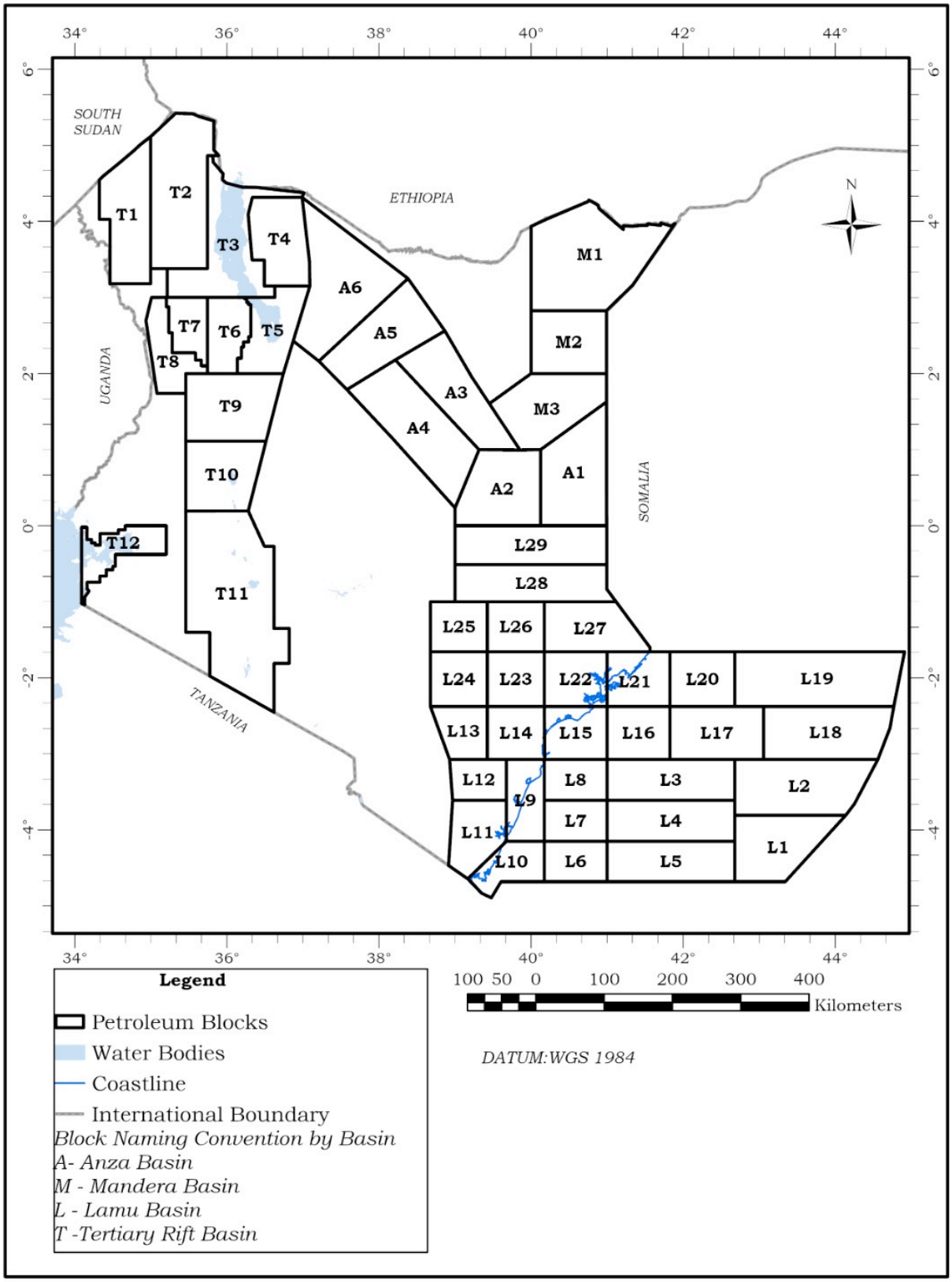

SECOND SCHEDULE
BASIN BLOCKS

1. **ANZA BASIN**

BLOCK A1

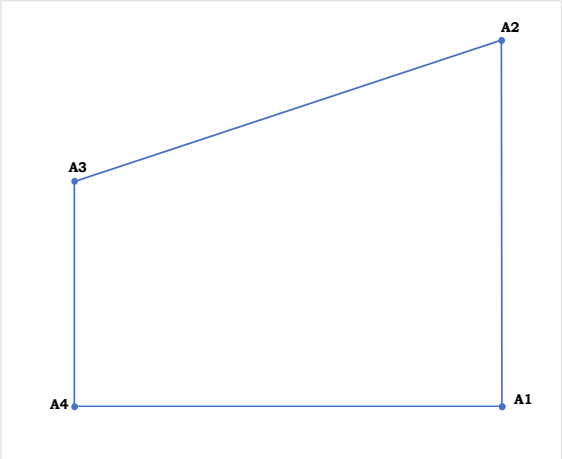

Area = 14,009.89 km²

Point ID	Longitude	Latitude
A1	40.9933	0.0000
A2	40.9918	1.6266
A3	40.1257	0.9993
A4	40.1257	0.0000
A1	40.9933	0.0000

BLOCK A2

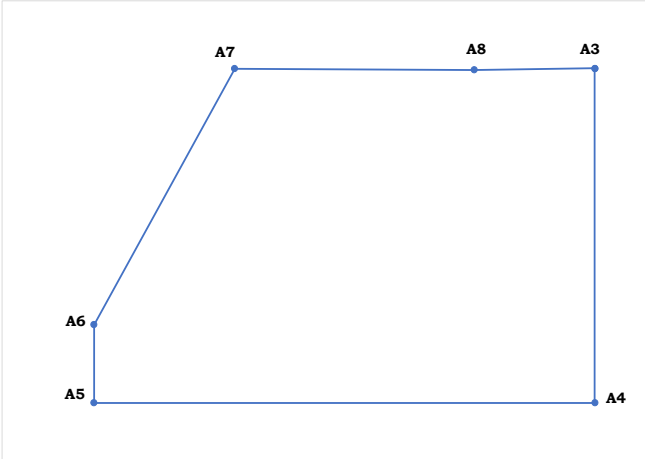

Area = 12,319.41 km²

Point ID	Longitude	Latitude
A3	40.1257	0.9993
A4	40.1257	0.0000
A5	39.0000	0.0000
A6	39.0000	0.2335
A7	39.3164	0.9983
A8	39.8545	0.9950
A3	40.1257	0.9993

BLOCK A3

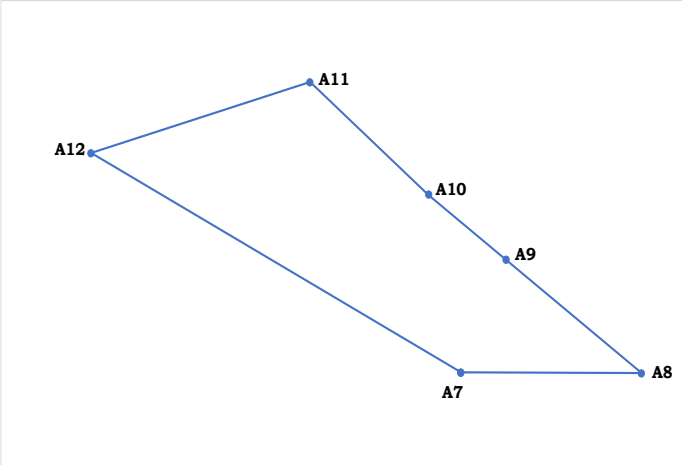

Area = 12,201.65 km²

Point ID	Longitude	Latitude
A7	39.3164	0.9983
A8	39.8545	0.9950
A9	39.4518	1.6043
A10	39.2198	1.9554
A11	38.8668	2.5612
A12	38.2144	2.1793
A7	39.3164	0.9983

BLOCK A4

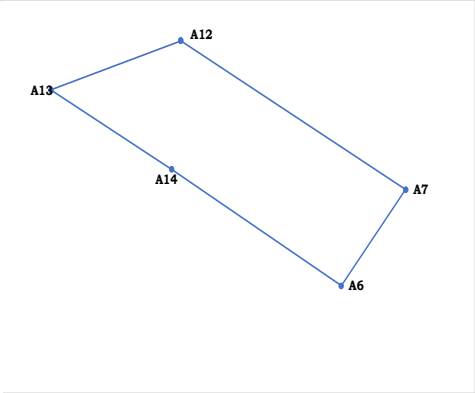

Area = 16,846.52 km²

Point ID	Longitude	Latitude
A12	38.2144	2.1793
A13	37.5781	1.7884
A14	38.1697	1.15690
A6	39.0004	0.2335
A7	39.3164	0.9983
A12	38.2144	2.1793

BLOCK A5

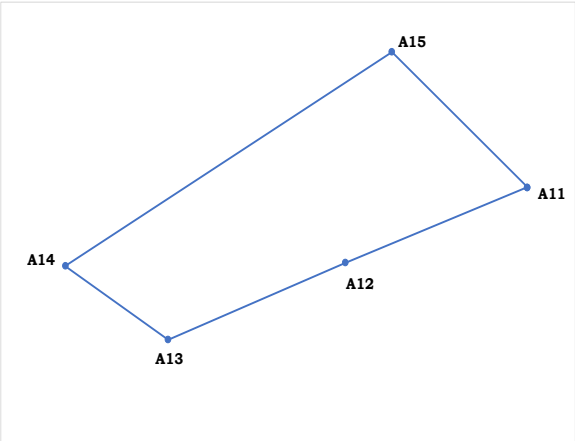

Area = 12,845.74 km²

Point ID	Longitude	Latitude
A11	38.8668	2.5612
A12	38.2144	2.1793
A13	37.5781	1.7884
A14	37.2095	2.1625
A15	38.3812	3.2498
A11	38.8668	2.5612

BLOCK A6

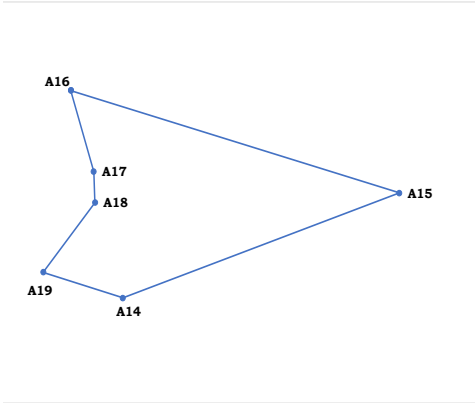

Area = 18,898.74 km²

Point ID	Longitude	Latitude
A16	36.9892	4.3155
A15	38.3812	3.2498
A14	37.2095	2.1625
A19	36.8721	2.4284
A18	37.0909	3.1504
A17	37.0859	3.4706
A16	36.9892	4.3155

2. **LAMU BASIN**

BLOCK L1

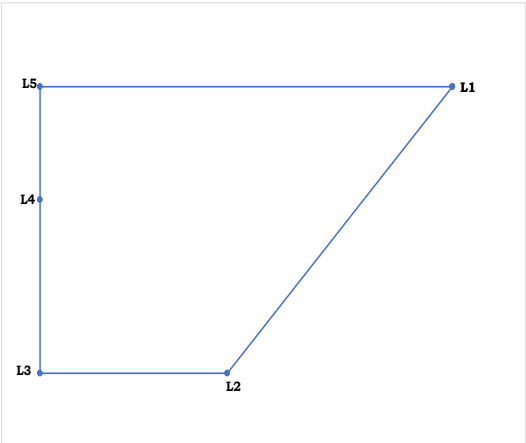

Area = 11,471.7 km²

Point ID	Longitude	Latitude
L1	44.1404	-3.8050
L2	43.3425	-4.6811
L3	42.6797	-4.6811
L4	42.6797	-4.1500
L5	42.6797	-3.8050
L1	44.1404	-3.8050

BLOCK L2

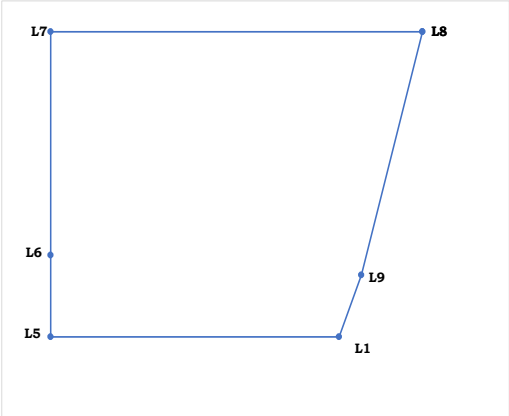

Area = 15,241.97 km²

Point ID	Longitude	Latitude
L8	44.5613	-3.0728
L9	44.2529	-3.6576
L1	44.1404	-3.8050
L5	42.6797	-3.8050
L6	42.6797	-3.6100
L7	42.6797	-3.0728
L8	44.5613	-3.0728

BLOCK L3

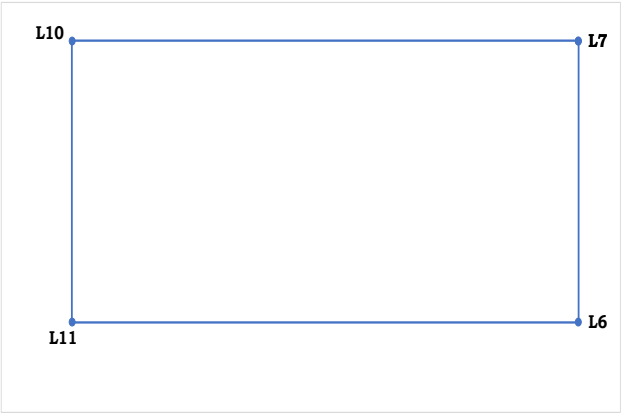

Area = 11,109.04 km²

Point ID	Longitude	Latitude
L7	42.6797	-3.0728
L6	42.6797	-3.6100
L11	41.0000	-3.6100
L10	41.0000	-3.0728
L7	42.6797	-3.0728

BLOCK L4

Area = 11,160.17 km²

Point ID	Longitude	Latitude
L6	42.6797	-3.6100
L5	42.6797	-3.8050
L4	42.6797	-4.1500
L12	41.0000	-4.1500
L11	41.0000	-3.6100
L6	42.6797	-3.6100

BLOCK L5



Area = 10,968.13 km²

Point ID	Longitude	Latitude
L4	42.6797	-4.1500
L3	42.6797	-4.6811
L13	41.0000	-4.6810
L12	41.0000	-4.1500
L4	42.6797	-4.1500

BLOCK L6



Area = 5,383.2 km²

Point ID	Longitude	Latitude
L12	41.0000	-4.1500
L13	41.0000	-4.6810
L14	40.1740	-4.6810
L15	40.1740	-4.1500
L12	41.0000	-4.1500

BLOCK L7

Area = 5,478.05 km²

Point ID	Longitude	Latitude
L11	41.0000	-3.6100
L12	41.0000	-4.1500
L15	40.1740	-4.1500
L16	40.1740	-3.6100
L11	41.0000	-3.6100

BLOCK L8



Area = 5,453.36 km²

Point ID	Longitude	Latitude
L10	41.0000	-3.0728
L11	41.0000	-3.6100
L16	40.1740	-3.6100
L18	40.1740	-3.0728
L17	40.7317	-3.0728
L10	41.0000	-3.0728

BLOCK L9

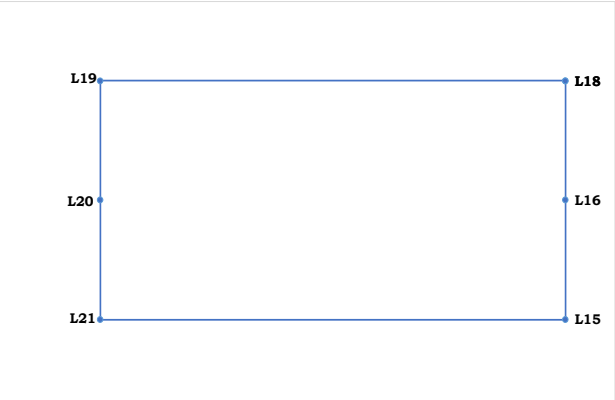

Area = 6,592.72 km²

Point ID	Longitude	Latitude
L18	40.1740	-3.0728
L16	40.1740	-3.6100
L15	40.1740	-4.1500
L21	39.6756	-4.1500
L20	39.6756	-3.6100
L19	39.6756	-3.0728
L18	40.1740	-3.0728

BLOCK L10

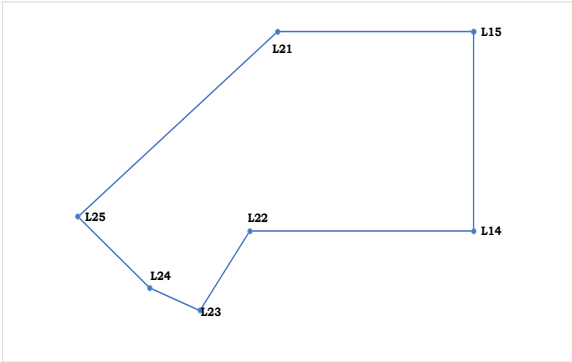

Area = 5,595.38 km²

Point ID	Longitude	Latitude
L15	40.1740	-4.1500
L14	40.1740	-4.6810
L22	39.6050	-4.6810
L23	39.4780	-4.8919
L24	39.3500	-4.8322
L25	39.1676	-4.6421
L21	39.6756	-4.1500
L15	40.1740	-4.1500

BLOCK L11

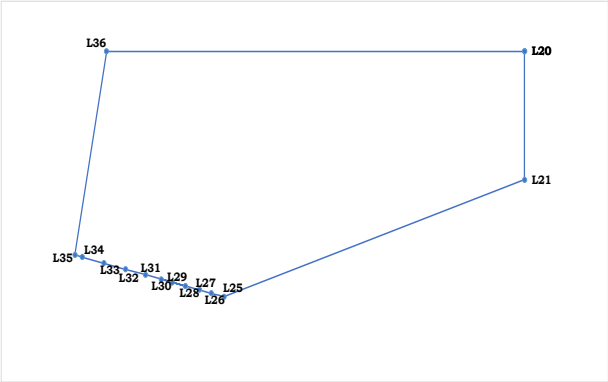

Area = 7,545.39 km²

Point ID	Longitude	Latitude
L20	39.6756	-3.6100
L21	39.6756	-4.1500
L25	39.1676	-4.6421
L26	39.1455	-4.6273
L27	39.1253	-4.6128
L28	39.0610	-4.5683
L29	39.0798	-4.5819
L30	39.1022	-4.5974
L31	39.0344	-4.5497
L32	39.0004	-4.5266
L33	38.9637	-4.5009
L34	38.9273	-4.4747
L35	38.9149	-4.4660
L36	38.9686	-3.6100
L20	39.6756	-3.6100

BLOCK L12

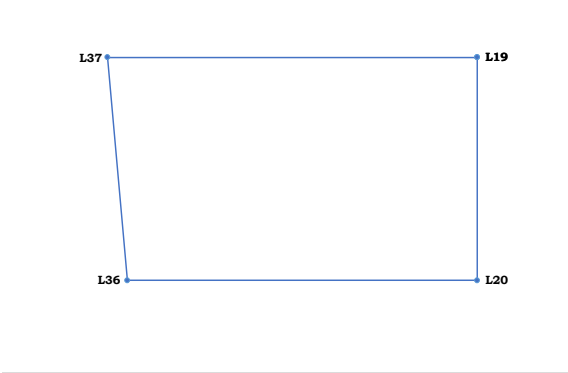

Area = 4,796.41 km²

Point ID	Longitude	Latitude
L19	39.6756	-3.0728
L20	39.6756	-3.6100
L36	38.9686	-3.6100
L37	38.9283	-3.0728
L19	39.6756	-3.0728

BLOCK L13

Area = 5,307.57 km²

Point ID	Longitude	Latitude
L40	39.4256	-3.0728
L37	38.9283	-3.0728
L38	38.6772	-2.3792
L39	39.4256	-2.3792
L40	39.4256	-3.0728

BLOCK L14

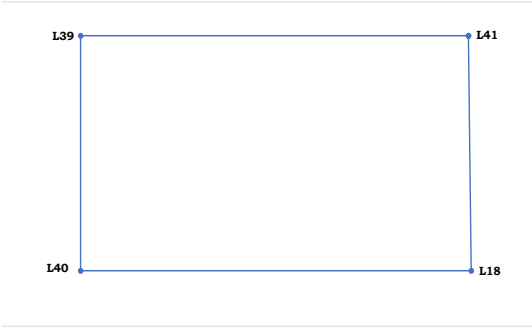

Area = 6,400.73 km²

Point ID	Longitude	Latitude
L41	40.1740	-2.3792
L18	40.1792	-3.0728
L40	39.4256	-3.0728
L39	39.4256	-2.3792
L41	40.1740	-2.3792

BLOCK L15

Area = 7,022.23 km²

Point ID	Longitude	Latitude
L42	41.0000	-2.3792
L10	41.0000	-3.0728
L18	40.1792	-3.0728
L41	40.1740	-2.3792
L42	41.0000	-2.3792

BLOCK L16

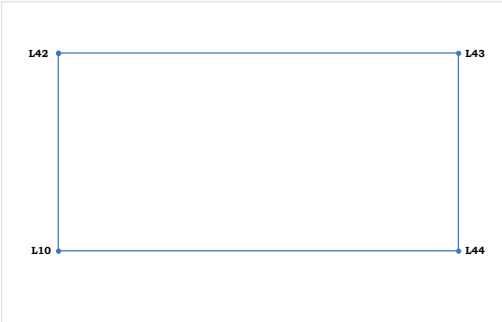

Area = 7,051.4 km²

Point ID	Longitude	Latitude
L42	41.0000	-2.3792
L43	41.8260	-2.3792
L44	41.8260	-3.0728
L10	41.0000	-3.0728
L42	41.0000	-2.3792

BLOCK L17

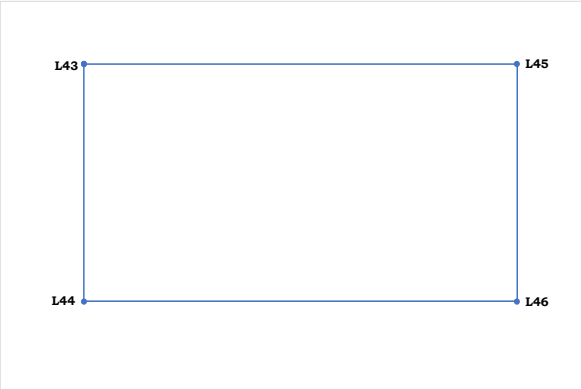

Area = 10,549.17 km²

Point ID	Longitude	Latitude
L43	41.8260	-2.3792
L45	43.0594	-2.3792
L46	43.0594	-3.0728
L44	41.8260	-3.0728
L43	41.8260	-2.3792

BLOCK L18

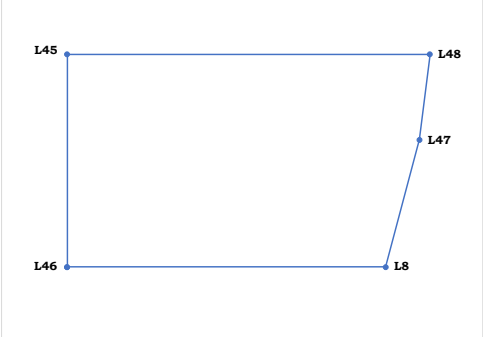

Area = 13,937.69 km²

Point ID	Longitude	Latitude
L46	43.0594	-3.0728
L45	43.0594	-2.3792
L48	44.7698	-2.3792
L47	44.7211	-2.6574
L8	44.5613	-3.0728
L46	43.0594	-3.0728

BLOCK L19

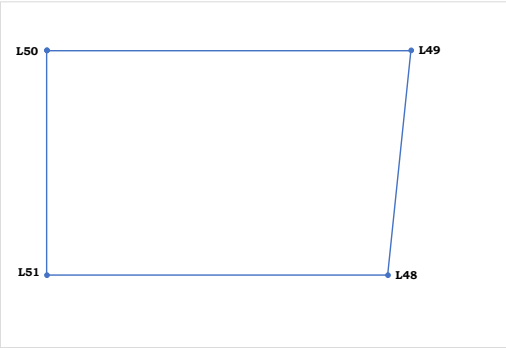

Area = 19,322.85 km²

Point ID	Longitude	Latitude
L50	42.6797	-1.6570
L49	44.9122	-1.6570
L48	44.7698	-2.3792
L51	42.6797	-2.3792
L50	42.6797	-1.6570

BLOCK L20



Area = 7,603.22 km²

Point ID	Longitude	Latitude
L52	41.8260	-1.6570
L50	42.6797	-1.6570
L51	42.6797	-2.3792
L43	41.8260	-2.3792
L52	41.8260	-1.6570

BLOCK L21

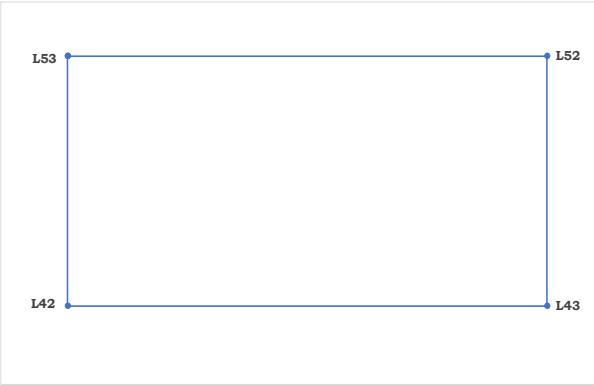

Area = 7,345.6 km²

Point ID	Longitude	Latitude
L53	41.0000	-1.6570
L52	41.8260	-1.6570
L43	41.8260	-2.3792
L42	41.0000	-2.3792
L53	41.0000	-1.6570

BLOCK L22

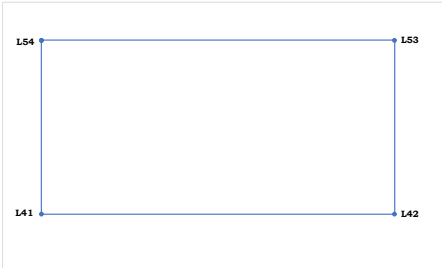

Area = 7,338.17 km²

Point ID	Longitude	Latitude
L54	40.1740	-1.6570
L53	41.0000	-1.6570
L42	41.0000	-2.3792
L41	40.1740	-2.3792
L54	40.1740	-1.6570

BLOCK L23

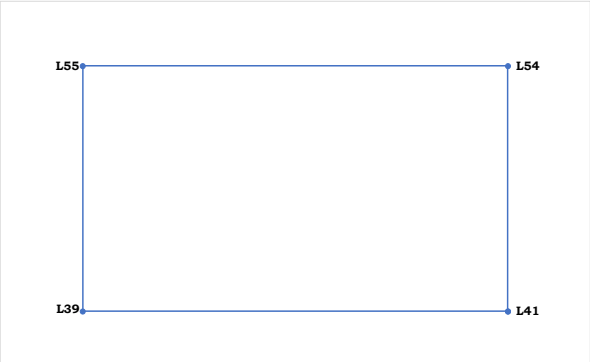

Area = 6,644.82 km²

Point ID	Longitude	Latitude
L41	40.1740	-2.3792
L39	39.4256	-2.3792
L55	39.4256	-1.6570
L54	40.1740	-1.6570
L41	40.1740	-2.3792

BLOCK L24

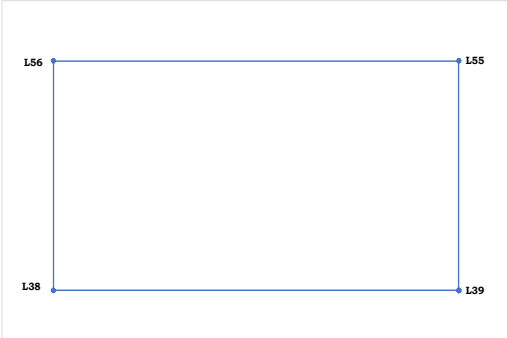

Area = 6,643.52 km²

Point ID	Longitude	Latitude
L39	39.4256	-2.3792
L38	38.6772	-2.3792
L56	38.6772	-1.6570
L55	39.4256	-1.6570
L39	39.4256	-2.3792

BLOCK L25



Area = 6,045.73 km²

Point ID	Longitude	Latitude
L57	38.6772	-1.0000
L56	38.6772	-1.6570
L55	39.4256	-1.6570
L58	39.4256	-1.0000
L57	38.6772	-1.0000

BLOCK L26

Area = 6,046.91 km²

Point ID	Longitude	Latitude
L58	39.4256	-1.0000
L55	39.4256	-1.6570
L54	40.1740	-1.6570
L59	40.1740	-1.0000
L58	39.4256	-1.0000

BLOCK L27



Area = 9,595.57 km²

Point ID	Longitude	Latitude
L54	40.1740	-1.6570
L60	41.5645	-1.6571
L61	41.5645	-1.6014
L62	41.1187	-1.0000
L59	40.1740	-1.0000
L54	40.1740	-1.6570

BLOCK L28

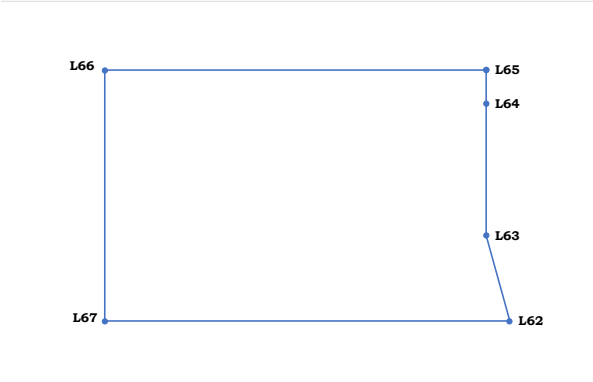

Area = 12,131.84 km²

Point ID	Longitude	Latitude
L65	40.9957	-0.5110
L64	40.9957	-0.5764
L63	40.9957	-0.8333
L62	41.1187	-1.0000
L67	39.0000	-1.0000
L66	39.0000	-0.5112
L65	40.9957	-0.5110

BLOCK L29



Area =12,550.94 km²

Point ID	Longitude	Latitude
L69	40.9957	0.0000
L70	40.9957	-0.1594
L65	40.9957	-0.5110
L66	39.0000	-0.5112
L68	39.0000	0.0000
L69	40.9957	0.0000

3. **MANDERA BASIN**

BLOCK M1

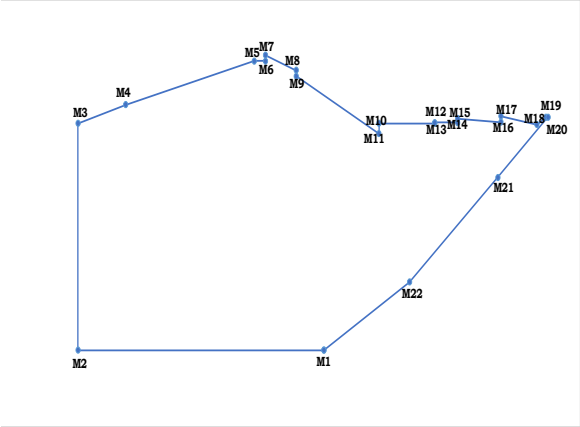

Area = 22,566.34 km²

Point ID	Longitude	Latitude
M1	40.9919	2.8278
M2	40.0007	2.8278
M3	40.0007	3.9348
M4	40.1988	4.0271
M5	40.7134	4.2456
M6	40.7481	4.2588
M7	40.7602	4.2813
M8	40.8817	4.2129
M9	40.8941	4.1682
M10	41.2135	3.8926
M11	41.2135	3.9423
M12	41.4392	3.9423
M13	41.4392	3.9476
M14	41.5300	3.9476
M15	41.5300	3.9671
M16	41.7054	3.9480
M17	41.7054	3.9777
M18	41.8500	3.9370
M19	41.8872	3.9734
M20	41.8944	3.9734
M21	41.6923	3.6776
M22	41.3367	3.1631
M1	40.9919	2.8278

BLOCK M2

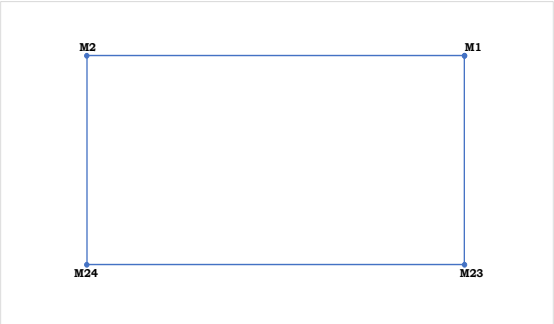

Area = 10,090.63 km²

Point ID	Longitude	Latitude
M1	40.9919	2.8278
M2	40.0007	2.8278
M24	40.0007	2.0000
M23	40.9919	2.0000
M1	40.9919	2.8278

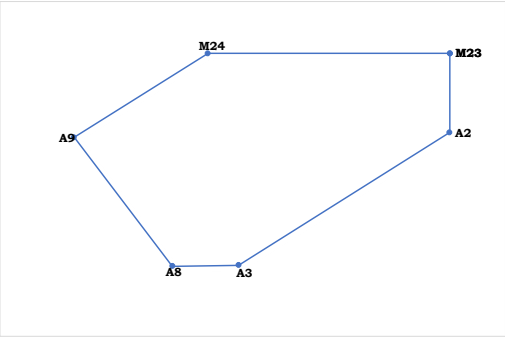

Area = 12,798.71 km²

Point ID	Longitude	Latitude
M23	40.9919	2.0000
M24	40.0007	2.0000
A9	39.4518	1.6043
A8	39.8545	0.9950
A3	40.1257	0.9993
A2	40.9918	1.6266
M23	40.9919	2.0000

4. **TERTIARY RIFT BASIN**

BLOCK T1

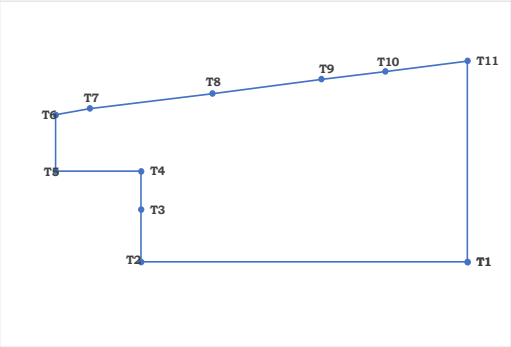

Point ID	Longitude	Latitude
T1	34.9975	3.1802
T2	34.4628	3.1802
T3	34.4628	3.6697
T4	34.4628	4.0269
T5	34.3228	4.0269
T6	34.3228	4.5449
T7	34.3785	4.5988
T8	34.5828	4.7659
T9	34.7643	4.9190
T10	34.8627	5.0097
T11	34.9975	5.1136
T1	34.9975	3.1802

Area = 12,305.84 km²

BLOCK T2

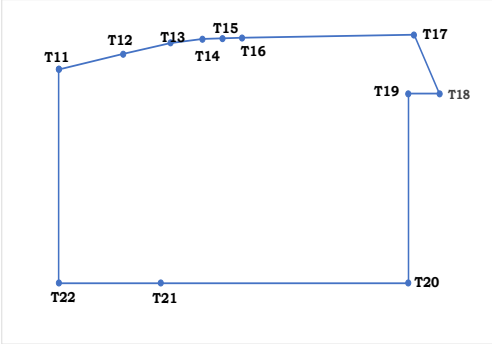

Area = 18,555.37 km²

Point ID	Longitude	Latitude
T11	34.9975	5.1136
T12	35.3249	5.4203
T13	35.5487	5.4155
T14	35.6370	5.3766
T15	35.8276	5.3216
T16	35.8276	5.1500
T17	35. 8276	4.9384
T18	35.9817	4.8650
T19	35.7444	4.8650
T20	35.7444	3.3784
T21	35.2153	3.3784
T22	34.9975	3.3784
T11	34.9975	5.1136

BLOCK T3

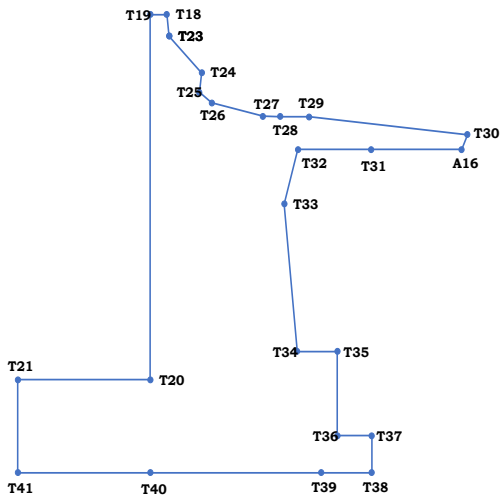

Area = 15,625.23 km²

Point ID	Longitude	Latitude
T23	35.9200	4.6612
T24	35.9429	4.6271
T25	35.9346	4.5457
T26	35.9881	4.5038
T27	36.1949	4.4514
T28	36.2636	4.4502
T29	36.3799	4.4482
T30	37.0126	4.3765
A16	36.9892	4.3155
T31	36.6266	4.3155
T32	36.3346	4.3155
T33	36.2799	4.0941
T34	36.3313	3.4931
T35	36.4919	3.4931
T36	36.4919	3.1504
T37	36.6302	3.1504
T38	36.6302	3.0000
T39	36.4280	3.0000
T40	35.7444	3.0000
T41	35.2153	3.0000
T21	35.2153	3.3784
T20	35.7444	3.3784
T19	35.7444	4.8650
T18	35.8917	4.8650
T23	35.9200	4.6612

BLOCK T4

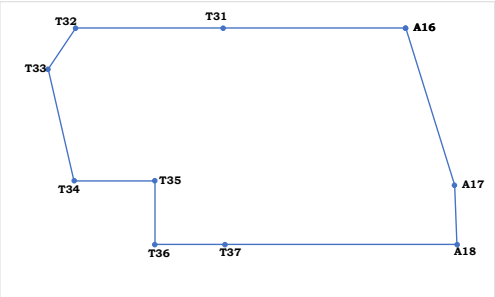

Area = 9,893.58 km²

Point ID	Longitude	Latitude
A16	36.9892	4.3155
A17	37.0859	3.4706
A18	37.0909	3.1504
T37	36.6302	3.1504
T36	36.4919	3.1504
T35	36.4919	3.4931
T34	36.3313	3.4931
T33	36.2799	4.0941
T32	36.3346	4.3155
T31	36.6266	4.3155
A16	36.9892	4.3155

BLOCK T5

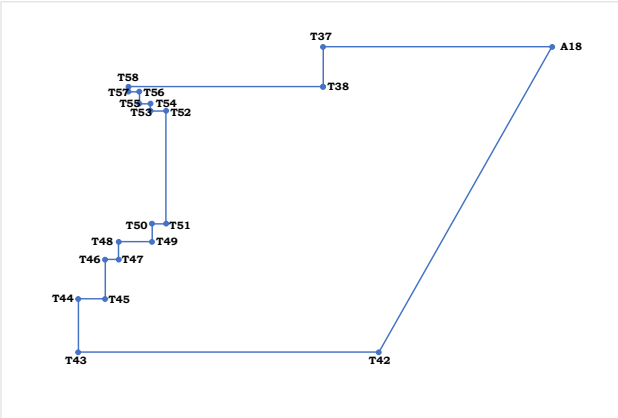

Area = 8,768.51 km²

Point ID	Longitude	Latitude
T38	36.6302	3.0000
T58	36.2379	3.0000
T57	36.2379	2.9808
T56	36.2603	2.9808
T55	36.2603	2.9356
T54	36.2826	2.9356
T53	36.2826	2.9084
T52	36.3140	2.9084
T51	36.3140	2.4838
T50	36.2857	2.4838
T49	36.2857	2.4154
T48	36.2184	2.4154
T47	36.2184	2.3486
T46	36.1913	2.3486
T45	36.1913	2.2009
T44	36.1371	2.2009
T43	36.1371	2.0000
T42	36.7422	2.0000
A18	37.0909	3.1504
T37	36.6302	3.1504
T38	36.6302	3.0000

BLOCK T6

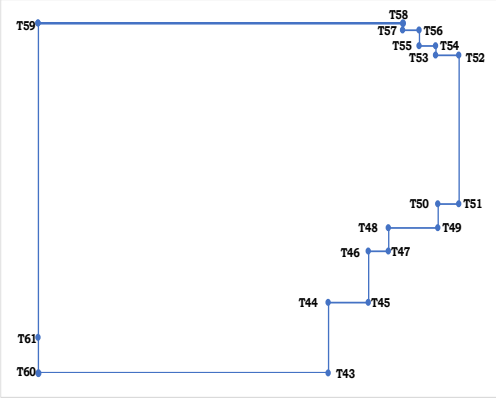

Area = 6,195.04 km²

Point ID	Longitude	Latitude
T59	35.7444	3.0000
T58	36.2379	3.0000
T57	36.2379	2.9808
T56	36.2603	2.9808
T55	36.2603	2.9356
T54	36.2826	2.9356
T53	36.2826	2.9084
T52	36.3140	2.9084
T51	36.3140	2.4838
T50	36.2857	2.4838
T49	36.2857	2.4154
T48	36.2184	2.4154
T47	36.2184	2.3486
T46	36.1913	2.3486
T45	36.1913	2.2009
T44	36.1371	2.2009
T43	36.1371	2.0000
T60	35.7444	2.0000
T61	35.7444	2.1013
T59	35.7444	3.0000

BLOCK T7

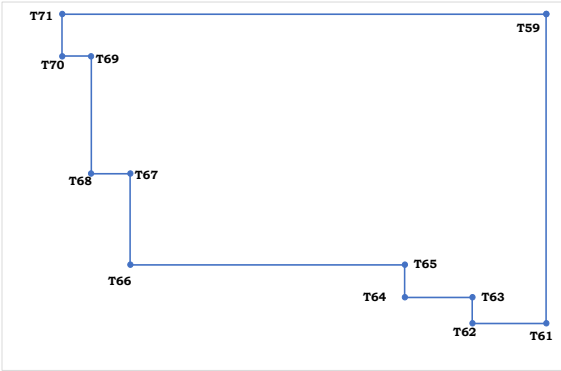

Area = 4,730.27 km²

Point ID	Longitude	Latitude
T59	35.7444	3.0000
T61	35.7444	2.1013
T62	35.6620	2.1013
T63	35.6620	2.1769
T64	35.5866	2.1769
T65	35.5866	2.2717
T66	35.2803	2.2717
T67	35.2803	2.5364
T68	35.2366	2.5364
T69	35.2366	2.8772
T70	35.2041	2.8773
T71	35.2041	3.0000
T59	35.7444	3.0000

BLOCK T8

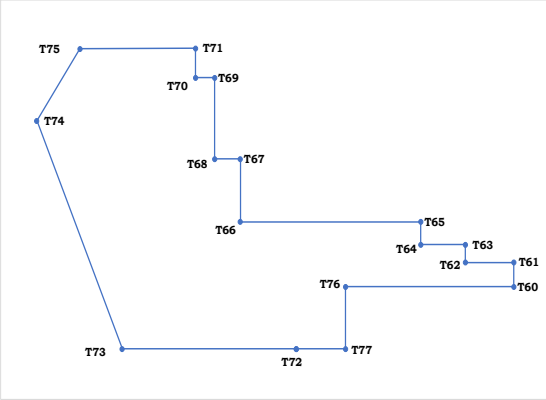

Area = 5,946.36 km²

Point ID	Longitude	Latitude
T72	35.3756	1.7393
T73	35.0799	1.7393
T74	34.9350	2.6963
T75	35.0081	2.9985
T71	35.2041	3.0000
T70	35.2041	2.8773
T69	35.2366	2.8772
T68	35.2366	2.5364
T67	35.2803	2.5364
T66	35.2803	2.2717
T65	35.5866	2.2717
T64	35.5866	2.1769
T63	35.6620	2.1769
T62	35.6620	2.1013
T61	35.7444	2.1013
T60	35.7444	2.0000
T76	35.4587	2.0000
T77	35.4587	1.7393
T72	35.3756	1.7393

BLOCK T9

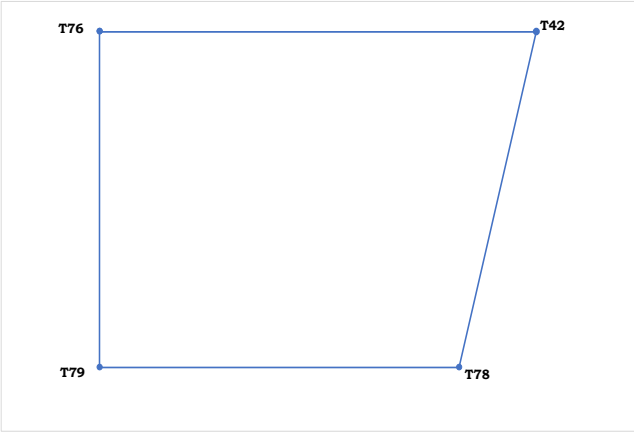

Area =12,802.32 km²

Point ID	Longitude	Latitude
T76	35.4587	2.0000
T42	36.7422	2.0000
T78	36.5150	1.1124
T79	35.4587	1.1124
T76	35.4587	2.0000

BLOCK T10



Area = 10,658.91 km²

Point ID	Longitude	Latitude
T79	35.4587	1.1124
T78	36.5150	1.1124
T80	36.2809	0.1932
T81	35.4587	0.1913
T79	35.4587	1.1124

BLOCK T11

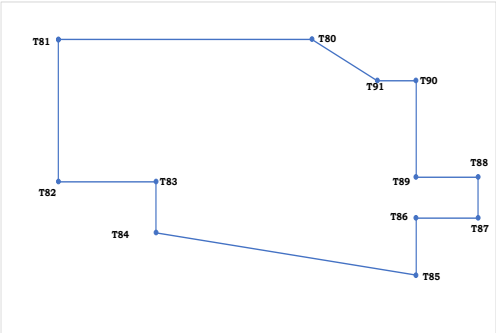

Area = 31,083.07 km²

Point ID	Longitude	Latitude
T81	35.4587	0.1913
T82	35.4587	-1.4035
T83	35.7751	-1.4035
T84	35.7751	-1.9771
T85	36.6190	-2.4524
T86	36.6190	-1.8108
T87	36.8202	-1.8108
T88	36.8202	-1.3514
T89	36.6190	-1.3514
T90	36.6190	-0.2703
T91	36.4930	-0.2703
T80	36.2809	0.1932
T81	35.4587	0.1913

BLOCK T12

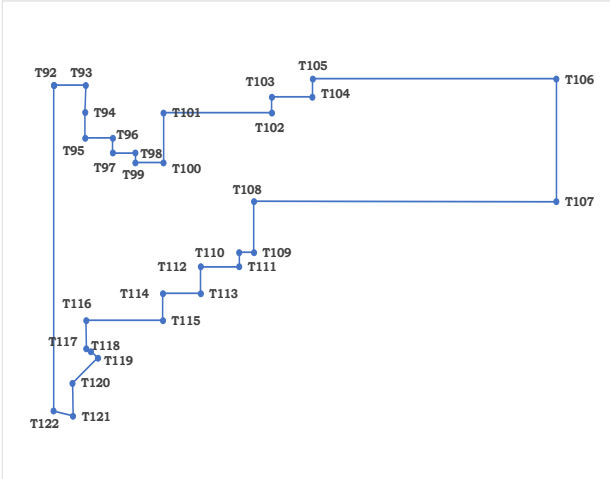

Area =6,233.46 km²

Point ID	Longitude	Latitude
T92	34.0888	-0.0195
T93	34.1596	-0.0195
T94	34.1583	-0.1034
T95	34.1582	-0.1825
T96	34.2193	-0.1825
T97	34.2193	-0.2285
T98	34.2696	-0.2285
T99	34.2696	-0.2581
T100	34.3320	-0.2581
T101	34.3322	-0.1046
T102	34.5720	-0.1046
T103	34.5720	-0.0562
T104	34.6620	-0.0562
T105	34.6624	0.0000
T106	35.2028	0.0000
T107	35.2028	-0.3783
T108	34.5324	-0.3780
T109	34.5322	-0.5355
T110	34.4999	-0.5355
T111	34.4999	-0.5793
T112	34.4144	-0.5793
T113	34.4142	-0.6617
T114	34.3305	-0.6617
T115	34.3305	-0.7445
T116	34.1606	-0.7445
T117	34.1609	-0.8329
T118	34.1713	-0.8406
T119	34.1864	-0.8604
T120	34.1304	-0.9381
T121	34.1316	-1.0397
T122	34.0886	-1.0239
T92	34.0888	-0.0195

Dated the 4th March, 2025.

OPIYO WANDAYI,
Cabinet Secretary for Energy and Petroleum.

PRINTED AND PUBLISHED BY THE GOVERNMENT PRINTER, NAIROBI