SPECIAL ISSUE

THE KENYA GAZETTE

Published by Authority of the Republic of Kenya

(Registered as a Newspaper at the G.P.O.)

Vol. CXXVII—No. 234 NAIROBI, 19th November, 2025 Price Sh. 60

GAZETTE NOTICE NO. 16780

THE LAND REGISTRATION ACT

(*No*. 3 *of* 2012)

THE LAND REGISTRATION (REGISTRATION UNITS) ORDER, 2017

CONVERSION AND MIGRATION

PURSUANT to regulation 4 (4) of the Land Registration (Registration Units) Order, 2017, the Cabinet Secretary for Lands and Physical Planning, having received from the Registrar conversion list and cadastral maps in respect of Nairobi Land Registration Unit, hereby notifies the general public that land reference numbers specified in the first column of the Schedule have been converted to new parcel numbers, specified in the second column thereof, with corresponding area respectively specified in the third column.

Any person with an interest in land within the registration unit who is aggrieved by the information in the conversion list or the cadastral maps is invited, within the next ninety (90) days from the date of publication of this notice to —

(a) make a complaint, in writing in Form LRA 96 set out in the Second Schedule to the Land Registration (Registration Units) Order, 2017, to the Registrar in respect of the information contained in

(b) the conversion list and the cadastral maps; or

(c) apply to the Registrar in Form L.R.A. 67 set out in the Sixth Schedule to the Land Registration (General) Regulations, 2017 for the registration of a caution pending the clarification or resolution of any complaint.

The conversion lists and cadastral maps can also be accessed from—

(i) Ministry of Lands and Physical Planning, Ardhi House, 1st Ngong Avenue, Nairobi.

(ii) Department of Surveys (Survey of Kenya), Ruaraka

(iii) Ministry website: https://lands.go.ke

All transactions or dealings relating to parcels affected by the notice shall from the 20th February, 2026, be carried out in the new registers.

SCHEDULE

NAIROBI/BLOCK 9

(MUTHAIGA EAST)

Old L.R. No.	*New Parcel No.*	*Area (Ha.)*
214/368	Nairobi Block 9/345	0.7122
214/369	Nairobi Block 9/344	0.5512

NAIROBI/BLOCK 19

(UPPER HILL)

Old L.R. No.	*New Parcel No.*	*Area (Ha.)*
1/1174	Nairobi Block 19/958	0.18
1/1175	Nairobi Block 19/959	0.1713
1/140	Nairobi Block 19/943	0.5135
1/334	Nairobi Block 19/956	0.3934

NAIROBI/BLOCK 23

(KILELESHWA)

Old L.R. No.	*New Parcel No.*	*Area (Ha.)*
209/14572	Nairobi Block 23/793	0.0998

NAIROBI/BLOCK 28

(CBD)

Old L.R. No.	*New Parcel No.*	*Area (Ha.)*
209/6229	Nairobi Block 28/748	0.2898

NAIROBI/BLOCK 31

(SOUTH HILL)

Old L.R. No.	*New Parcel No.*	*Area (Ha.)*
209/13702	Nairobi Block 31/360	0.3422

NAIROBI/BLOCK 34

(PARKLANDS SOUTH)

Old L.R. No.	*New Parcel No.*	*Area (Ha.)*
209/75/15	Nairobi Block 34/669	0.1769

NAIROBI/BLOCK 42

(STAREHE)

Old L.R. No.	*New Parcel No.*	*Area (Ha.)*
209/21899	Nairobi Block 42/1196	0.2518
209/21900	Nairobi Block 42/1197	0.7107
209/21868	Nairobi Block 42/1218	0.278
209/21869	Nairobi Block 42/1219	0.3109
209/16779	Nairobi Block 42/1214	0.1781
209/16780	Nairobi Block 42/1215	0.1626

NAIROBI/BLOCK 47

(KAREN MUTUINI)

Old L.R. No.	*New Parcel No.*	*Area (Ha.)*
7583/62	Nairobi Block 47/645	1.704

NAIROBI/BLOCK 48

(DAGORETTI MUTUINI)

Old L.R. No.	*New Parcel No.*	*Area (Ha.)*
Dagoretti Mutuini/1697	Nairobi Block 48/1697	0.09
Dagoretti Mutuini/1698	Nairobi Block 48/1698	0.09
Dagoretti Mutuini/1699	Nairobi Block 48/1699	0.09
Dagoretti Mutuini/1700	Nairobi Block 48/1700	0.09
Dagoretti Mutuini/1701	Nairobi Block 48/1701	0.09
Dagoretti Mutuini/1702	Nairobi Block 48/1702	0.09
Dagoretti Mutuini/1703	Nairobi Block 48/1703	0.09
Dagoretti Mutuini/1704	Nairobi Block 48/1704	0.09
Dagoretti Mutuini/1705	Nairobi Block 48/1705	0.09

NAIROBI/BLOCK 49

(EASTLEIGH NORTH)

Old L.R. No.	*New Parcel No.*	*Area (Ha.)*
36/I/137	Nairobi Block 49/613	0.043
36/II/8	Nairobi Block 49/412	0.0557
36/II/347	Nairobi Block 49/1519	0.0465
36/II/1038	Nairobi Block 49/1518	0.0454

NAIROBI/BLOCK 50

(EASTLEIGH SOUTH)

Old L.R. No.	*New Parcel No.*	*Area (Ha.)*
36/III/1036	Nairobi Block 50/1049	0.0404
36/III/107	Nairobi Block 50/1041	0.0488
36/III/108	Nairobi Block 50/1040	0.0488
36/III/94	Nairobi Block 50/1050	0.0465

NAIROBI/BLOCK 58

(OIL DEPOT)

Old L.R. No.	*New Parcel No.*	*Area (Ha.)*
209/8193	Nairobi Block 58/617	0.1394

NAIROBI/BLOCK 59

(LIKONI ROAD)

Old L.R. No.	*New Parcel No.*	*Area (Ha.)*
209/4261	Nairobi block 59/346	0.8082
209/4262	Nairobi block 59/347	0.3994

NAIROBI/BLOCK 63

(IMPALA)

Old L.R. No.	*New Parcel No.*	*Area (Ha.)*
209/13541	Nairobi Block 63/1414	0.0479

NAIROBI/BLOCK 125

(IMARA DAIMA)

Old L.R. No.	*New Parcel No.*	*Area (Ha.)*
209/11288	Nairobi Block 125/2210	2.428
209/22537	Nairobi Block 125/2160	1.115

NAIROBI/BLOCK 128

(DAGORETTI RUTHIMITU)

Old L.R. No.	*New Parcel No.*	*Area (Ha.)*
Dagoretti/Ruthimitu/1244	Nairobi Block 128/1244	0.1

NAIROBI/BLOCK 131

(DAGORETTI UTHIRU)

Old L.R. No.	*New Parcel No.*	*Area (Ha.)*
Dagoretti/Uthiru/1620	Nairobi Block 131/1620	0.302
Dagoretti/Uthiru/1621	Nairobi Block 131/1621	0.272

NAIROBI/BLOCK 137

(KAREN)

Old L.R. No.	*New Parcel No.*	*Area (Ha.)*
2259/870	Nairobi Block 137/1178	0.809
12882/18	Nairobi Block 137/678	2.397
1160/446	Nairobi Block 137/1163	1

NAIROBI/BLOCK 148

(GALLERIA)

Old L.R. No.	*New Parcel No.*	*Area (Ha.)*
21984/81	Nairobi Block 148/2166	3.759

NAIROBI/BLOCK 183

(MARURUI)

Old L.R. No.	*New Parcel No.*	*Area (Ha.)*
19928/47	Nairobi Block 183/359	0.1099
19928/48	Nairobi Block 183/360	0.0815

NAIROBI/BLOCK 192

(KAREN HARDY)

Old L.R. No.	*New Parcel No.*	*Area (Ha.)*
2327/10	Nairobi Block 192/1158	2.096

NAIROBI/BLOCK 197

(NYARI)

Old L.R. No.	*New Parcel No.*	*Area (Ha.)*
28587	Nairobi block 197/516	17.703
28586	Nairobi block 197/516	18.04

NAIROBI/BLOCK 206

(MIHANGO)

Old L.R. No.	*New Parcel No.*	*Area (Ha.)*
6845/76	Nairobi Block 206/7182	5.275

NAIROBI/BLOCK 207

(MIHANGO)

Old L.R. No.	*New Parcel No.*	*Area (Ha.)*
13418/478	Nairobi Block 207/728	0.0918
13418/479	Nairobi Block 207/729	0.0837
13418/480	Nairobi Block 207/730	0.0291
13418/481	Nairobi Block 207/731	0.0298
13418/482	Nairobi Block 207/732	0.0519
13418/483	Nairobi Block 207/733	0.0457

Old L.R. No.	*New Parcel No.*	*Area (Ha.)*
13418/484	Nairobi Block 207/737	0.047
13418/485	Nairobi Block 207/736	0.047
13418/486	Nairobi Block 207/735	0.047
13418/487	Nairobi Block 207/734	0.047

NAIROBI/BLOCK 229

(TWO RIVERS)

Old L.R. No.	*New Parcel No.*	*Area (Ha.)*
22/365	Nairobi Block 229/476	41.21

NAIROBI/BLOCK 263

(KWA NJENGA)

Old L.R. No.	*New Parcel No.*	*Area (Ha.)*
209/22666	Nairobi Block 263/4611	0.4061
209/22667	Nairobi Block 263/4612	0.4477

Dated the 3rd November, 2025.

ALICE WAHOME,
Cabinet Secretary for Lands,
Public Works, Housing and Urban Development.

PRINTED AND PUBLISHED BY THE GOVERNMENT PRINTER, NAIROBI

SCALE 1:2,500

NAIROBI BLOCK 9 (MUTHAIGA EAST)

NAIROBI BLOCK 9

AMENDMENTS

NO	DATE	OLD PARCEL NO	NEW PARCEL NO	FILE REF	PLAN REF	NAME	SIGN
1	[illegible]	–	996	[illegible]	[illegible]	[illegible]	[illegible]
2	[illegible]	[illegible]	[illegible]	[illegible]	[illegible]	[illegible]	[illegible]
3	[illegible]	[illegible]	342	[illegible]	[illegible]	[illegible]	[illegible]
4	[illegible]	[illegible]	345	[illegible]	[illegible]	[illegible]	[illegible]

COMPILED BY SURVEY OF KENYA

NAIROBI BLOCK 19 (UPPER HILL)

SCALE 1:2500

NAIROBI BLOCK 19

NAIROBI BLOCK 23 (KILELESHWA)

NAIROBI BLOCK 23

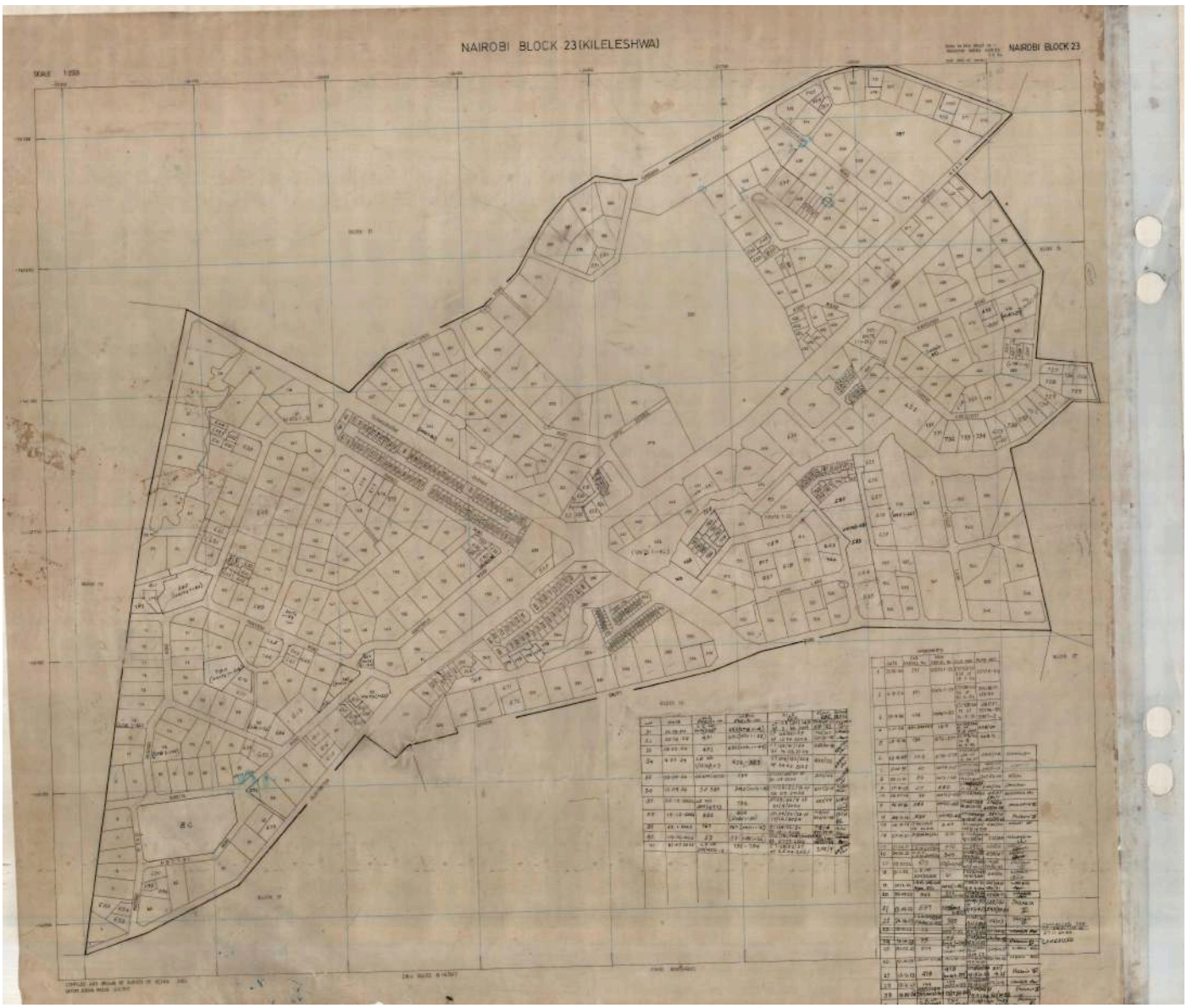

NAIROBI COUNTY

NAIROBI BLOCK 28 (CBD)

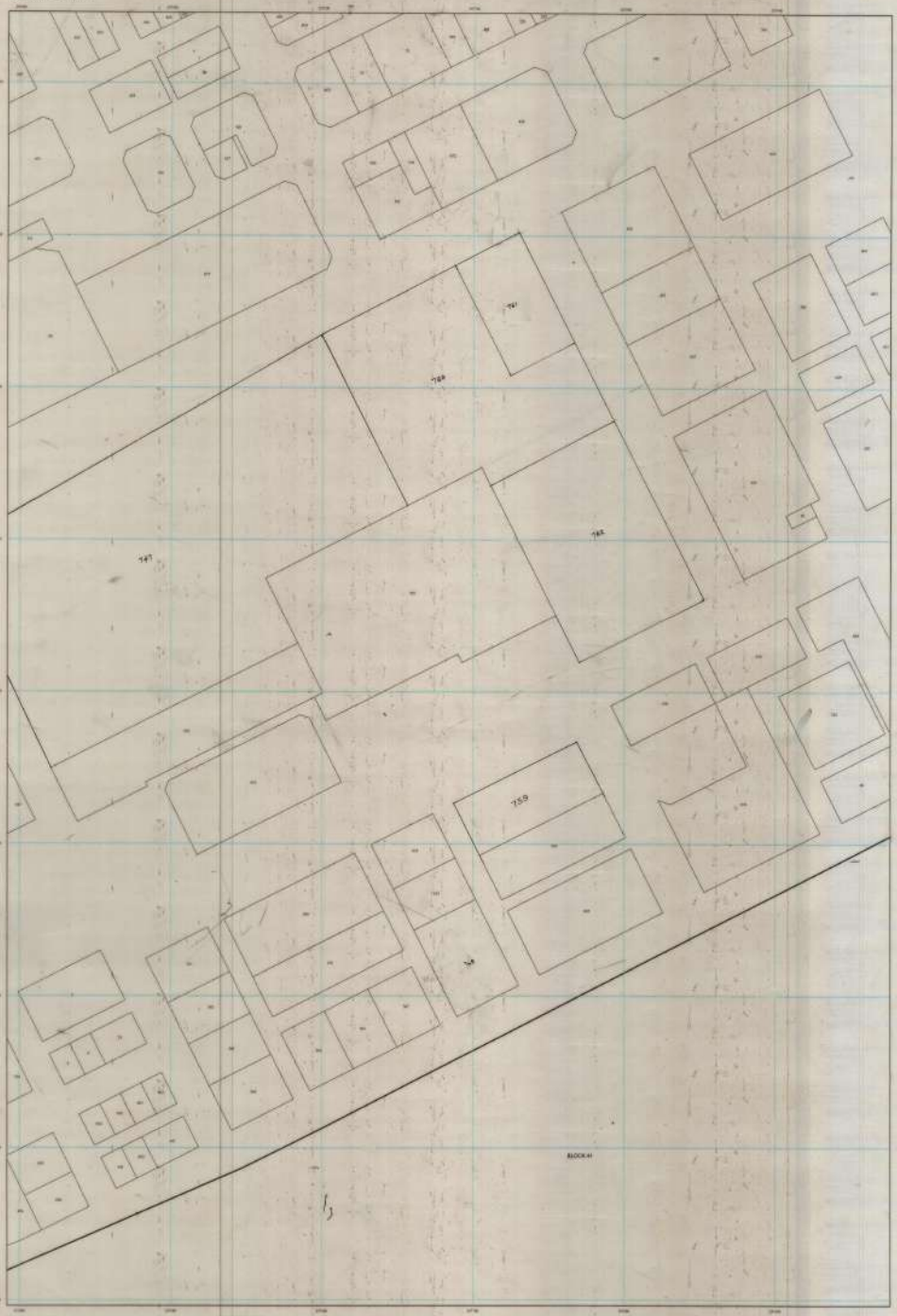

Datum: Mean Arc 1960

Projection: UTM Zone 37S

Published by Survey of Kenya, April 2022

FIXED BOUNDARY

DATE	DATUM	FILE REFERENCE	NEW PARCEL NO.	FILE REF	PLAN REF	PARCEL AREA

SCALE 1:1000

Grid values in metres

SECOND EDITION

Compiled by Survey of Kenya April, 2022

Compiled from FRs: 100/46, 104/18, 106/139, 110/121,

132/102, 124/65 (See Sectional Film)

INDEX TO ADJOINING SHEETS

Scale 1:2500
NAIROBI BLOCK 31 (South Hill)
BLOCK 27
BLOCK 32
NAIROBI BLOCK 31

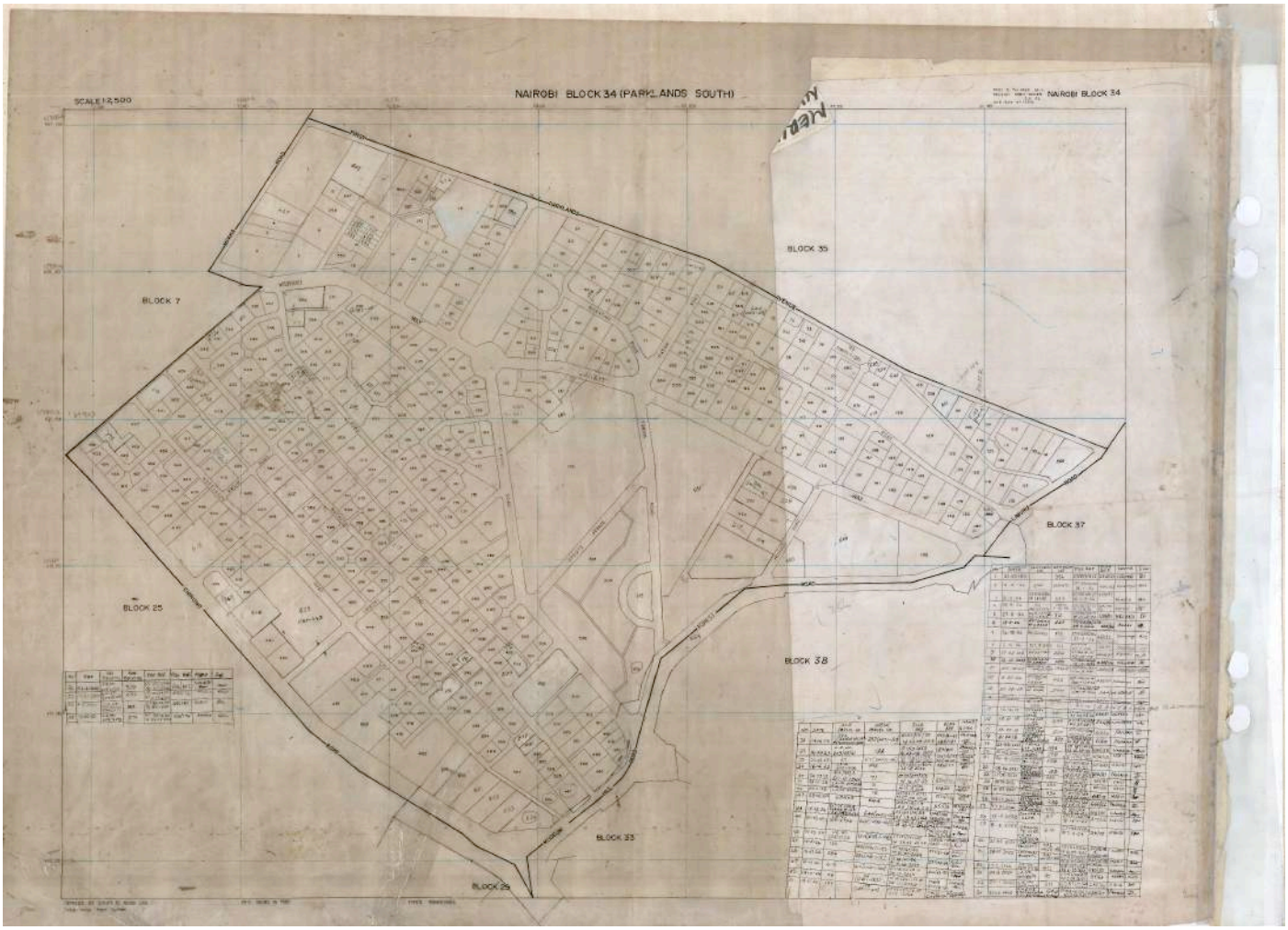
SCALE 1:2500
NAIROBI BLOCK 34 (PARKLANDS SOUTH)
NAIROBI BLOCK 34
BLOCK 7
BLOCK 35
BLOCK 37
BLOCK 25
BLOCK 38
BLOCK 33
BLOCK 29

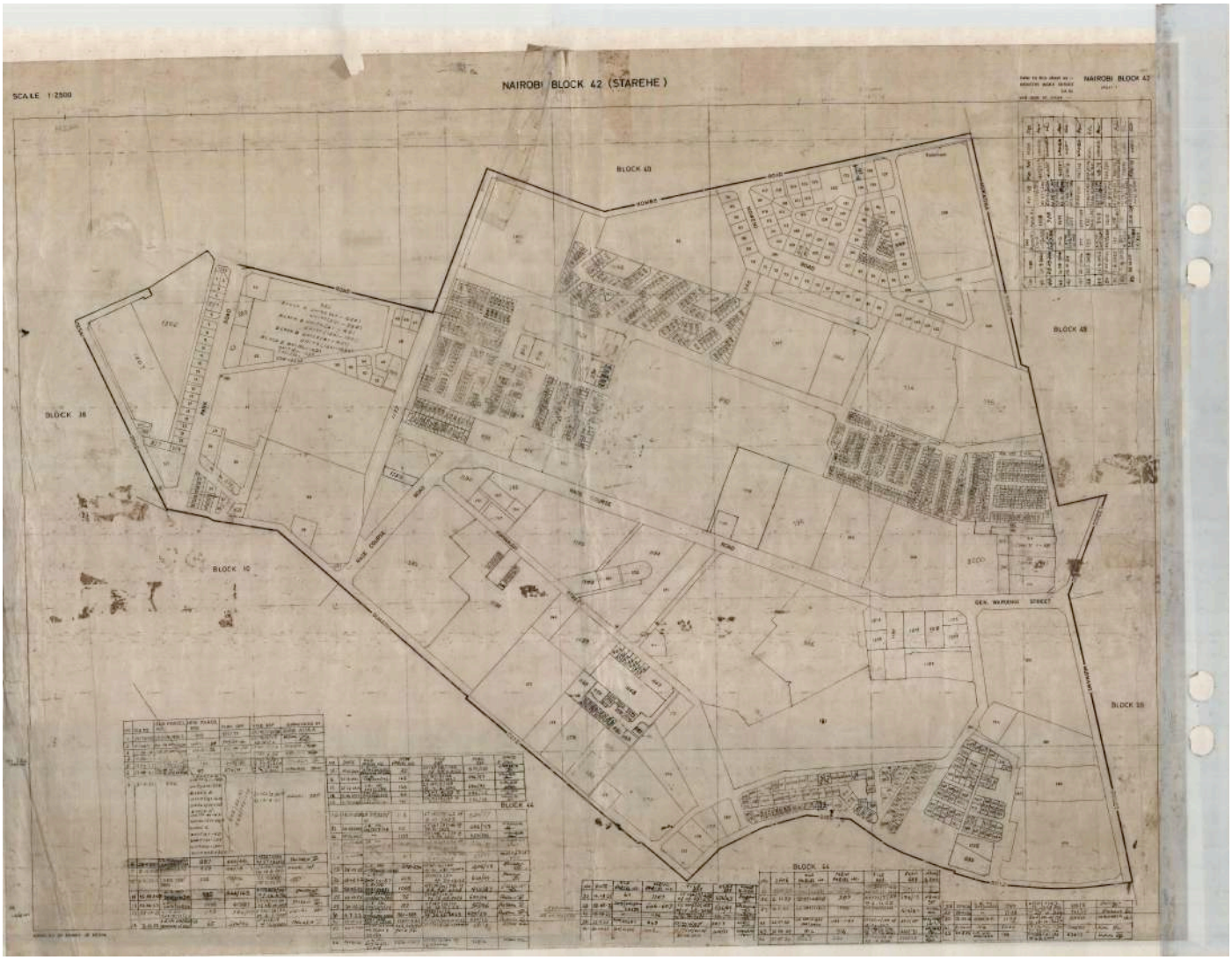
NAIROBI BLOCK 42 (STAREHE)
SCALE 1:2500
NAIROBI BLOCK 42
BLOCK 43
BLOCK 48
BLOCK 16
BLOCK 10
BLOCK 44
BLOCK 55
BLOCK 58
GEN. WAIREMU STREET

NAIROBI COUNTY

NAIROBI BLOCK 47 (KAREN MUTUINI)

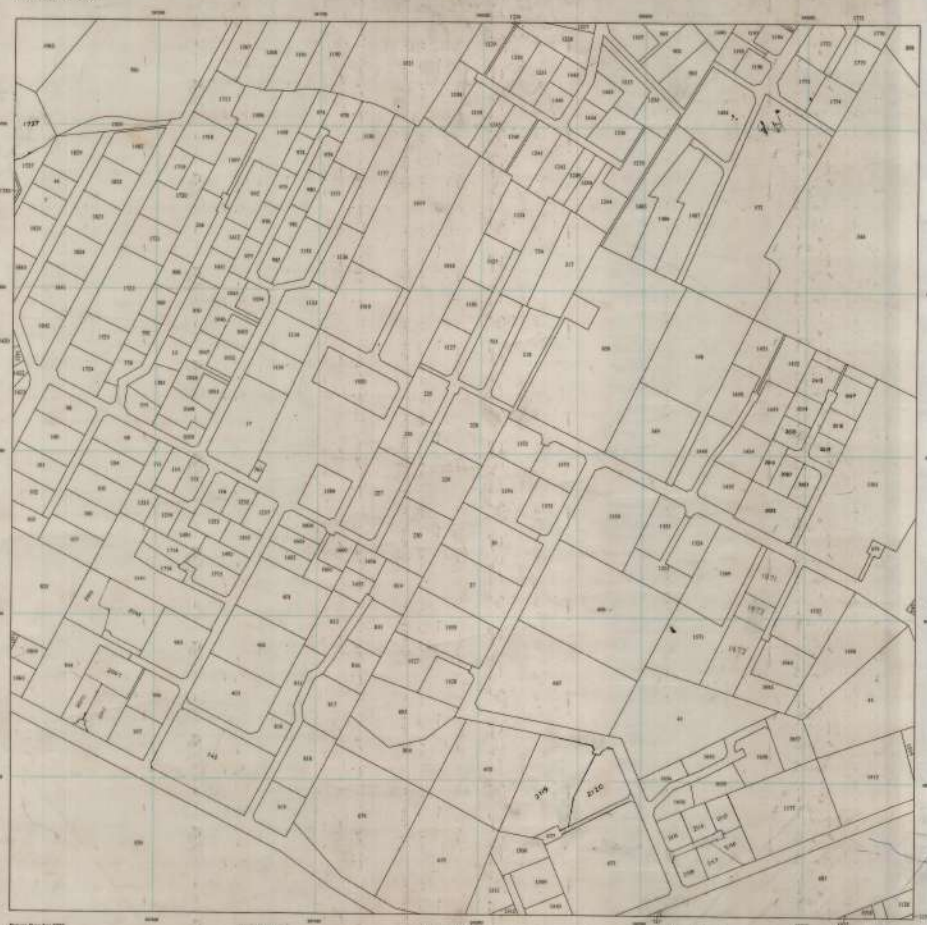

Datum: Arc 1960
Projection: UTM Zone 37S
Published by Survey of Kenya May 2022

FOREST BOUNDARY

SCALE 1:2500

No.	Date	Area Cancelled	Area Added	File Ref	Plan Ref	Signature	Type
1	30-09-2002	17.7 Ha 43.75Acres	8411-1975	12/2/2/7/8 12/2/2/7/8	12/2/7/8	[illegible]	[illegible]
2	4-11-2003	7.2Ha 17.8Acres	2863-1977	12/2/2/7/8 12/2/2/7/8	1.8Acres	[illegible]	[illegible]
3	9-02-2005	2.4Ha 5.93Acres	7337-1984	12/2/2/7/8 12/2/2/7/8	5.93 Ac	[illegible]	[illegible]
4	26-7-07	[illegible]	8409-1985	12/2/2/7/8 12/2/2/7/8	[illegible]	[illegible]	[illegible]
5	28-10-2011	1.4 Ha 3.46Acres	8409, 8408, 8410, 8411, 8412, 8413, 8414, 8415	12/2/2/7/8 12/2/2/7/8	3.46Ac	[illegible]	[illegible]
6	28-10-2011	1.4Ha 3.46Acres	8416-2003	12/2/2/7/8 12/2/2/7/8	[illegible]	[illegible]	[illegible]
7	28-10-2011	[illegible]	[illegible]	12/2/2/7/8 12/2/2/7/8	2.08 Ha	[illegible]	[illegible]
8	22-07-2014	[illegible]	17	12/2/2/7/8 12/2/2/7/8	60.79	[illegible]	[illegible]
9	18-12-2014	0.8 Ha 1.98Acres	8416	12/2/2/7/8 12/2/2/7/8	0.8Ha	[illegible]	[illegible]
10	15-10-14	0.4Ha 0.99Acres	8416-2010	12/2/2/7/8 12/2/2/7/8	0.99Ac	[illegible]	[illegible]
11	15-10-14	0.4Ha 0.99Acres	8416-2010	12/2/2/7/8 12/2/2/7/8	0.99Ac	[illegible]	[illegible]
12	17-12-15	[illegible]	8415-2006	12/2/2/7/8 12/2/2/7/8	[illegible]	[illegible]	[illegible]
13	23-9-20	[illegible]	[illegible]	[illegible]	[illegible]	[illegible]	[illegible]
14	20-12-2018	[illegible]	7337	12/2/2/7/8 12/2/2/7/8	5.93Ac	[illegible]	[illegible]

Cancelled due to duplication
Cancelled due to duplication

Cancelled 12/2/2/7/8

RECORD EDITION
Compiled by Survey of Kenya May, 2022
Compiled from FPs 77/192, 12/2/1/91, 1858, 3444, 126/124, 486/145, 372/21, 828/18 (Non Textured File)

INDEX TO ADJOINING SHEETS

File 2/3

NAIROBI COUNTY

NAIROBI BLOCK 48 (DAGORETTI MUTUINI)

SCALE 1:2500

SHEET No.5

SCALE 1:2,500

NAIROBI-BLOCK 49 (EASTLEIGH NORTH)

Refer to this plan as:- RECORDER INDEX SERIES S.R.04 and date of issue:-

NAIROBI-BLOCK 49

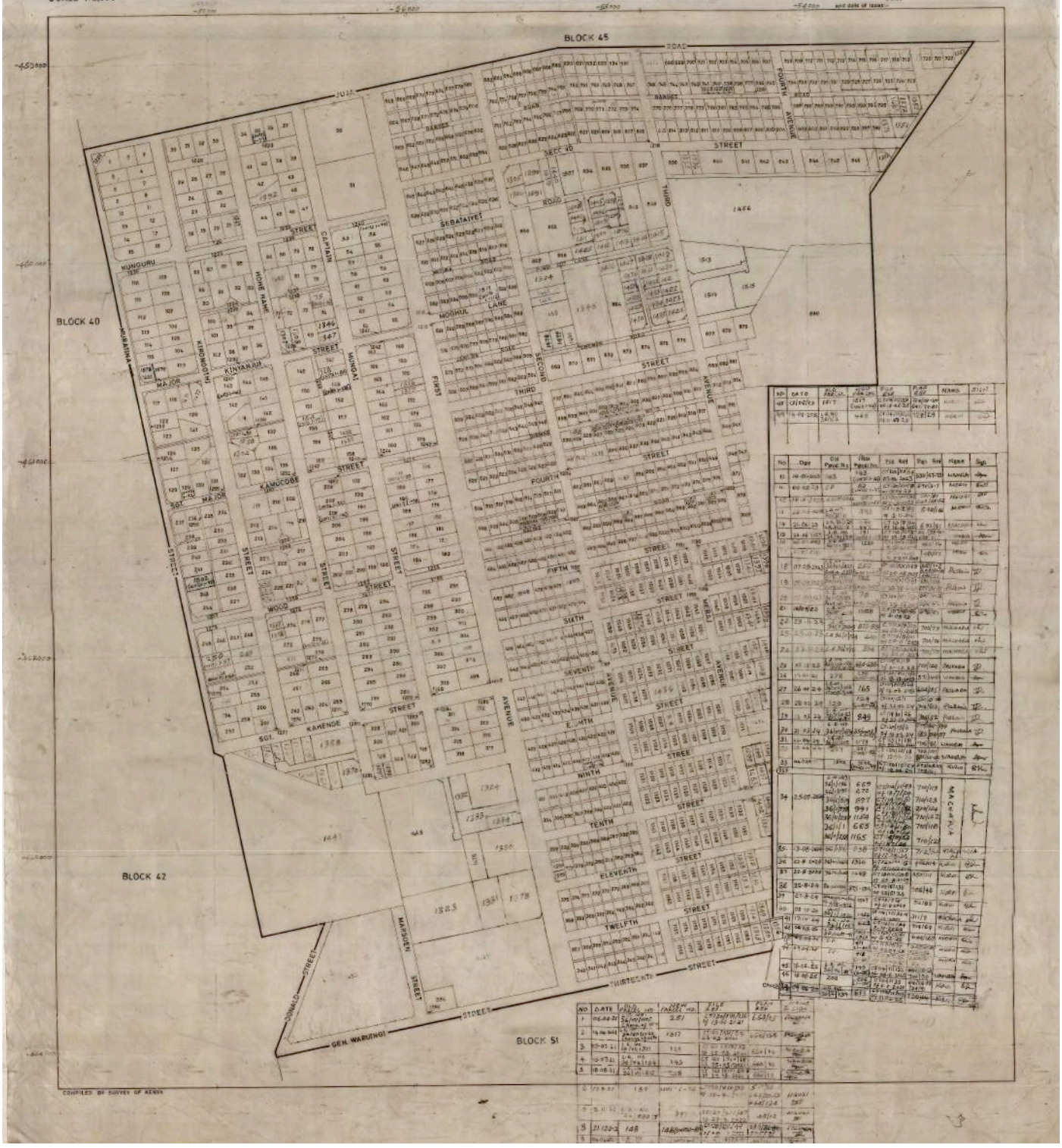

NAIROBI BLOCK 50 (EASTLEIGH SOUTH)

Refer to this map as: REGISTRY INDEX SERIES
and date of issue:
[Sheet 1 of 6 (Part of 146/4)]

NAIROBI COUNTY

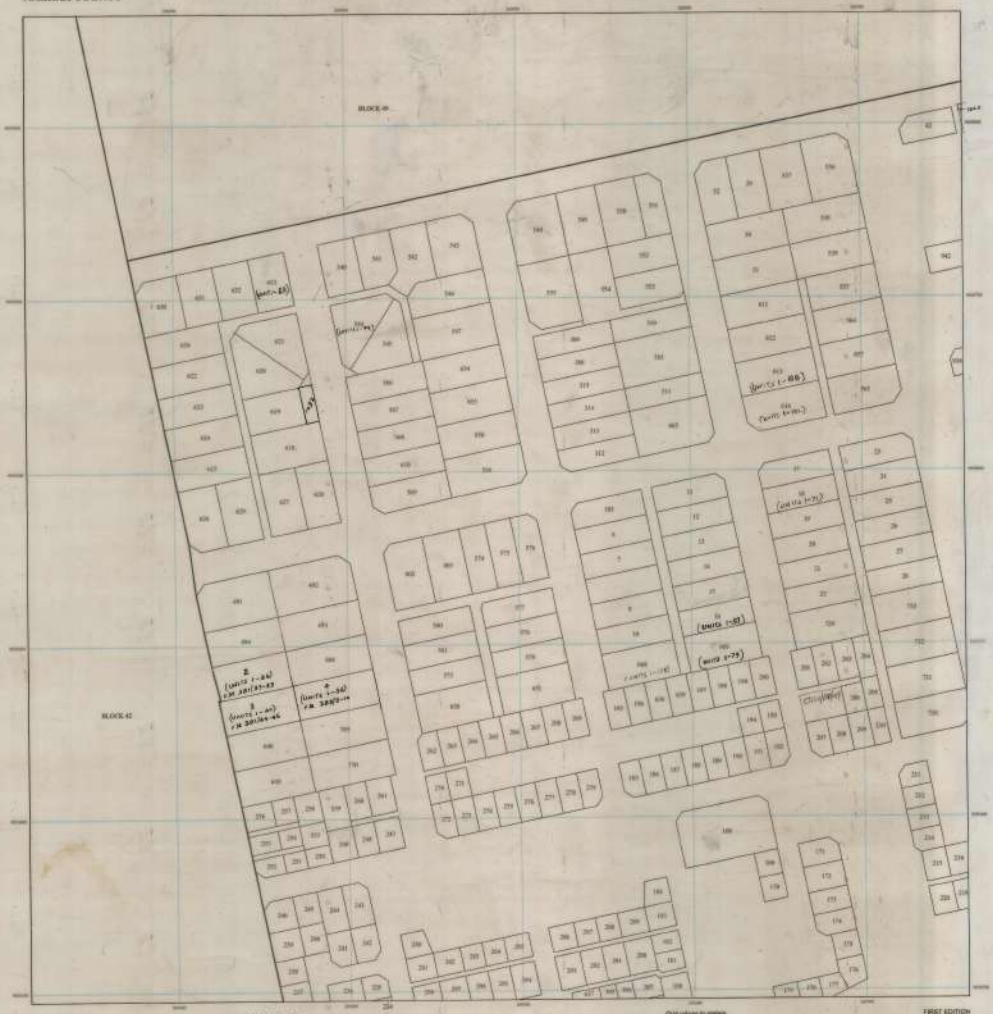

Datum: Hse Arc 1960
Projection: UTM Zone 37S
Published by Survey of Kenya, August 2021

FIXED BOUNDARY

Old values in italics

SCALE 1:1000

No.	DATE	OLD PARCEL No.	NEW PARCEL No.	FILE REF	PLAN REF	NAME & SIGN
1.	09-06-2022	36/VII/1738 L.R. No.	562	29/06/2022	186/147	
2	19-06-2023	36/VII/1723 L.R. No.	448(units 1-75)	19/06/2023	448/1-75	
3	19-06-2023	36/VII/1724 L.R. No.	449(units 1-80)	19/06/2023	449/1-80	
4	19-06-2023	36/VII/1725 L.R. No.	450(units 1-92)	19/06/2023	450/1-92	
5	20-06-23	36/VII/1726	663	20/06/2023	663/1-24	
6	21-06-23	36/VII/1727 (Units 1-24)	16	21-06-2023	16/1-24	
7.	18-11-23	C.T. No.	1732	17/11/2023	1732/1-24	
8	18-11-23	36/VII/1734 L.R. No.	18(units 1-24)	17/11/2023	18/1-24	
9.	19-11-23	36/VII/1735 L.R. No.	1735(units 1-25)	19/11/2023	1735/1-25	
10	23-11-23	36/VII/1736	1736(units 1-40)	23-11-2023	1736/1-40	
11	20-07-24	613	613(units 1-80)	20/07/2024	613/1-80	
12	12-12-24	564	564(units 1-75)	12-12-2024	564/1-75	
13	12-12-24	565	565(units 1-92)	12-12-2024	565/1-92	

FIRST EDITION
Digitized by Survey of Kenya, August, 2021
Compiled from File 46/37, 118/73, 118/74, 156/157, 400/200, 402/195 (See Technical File)

INDEX TO ADJOINING SHEETS

NAIROBI BLOCK 50 (EASTLEIGH SOUTH)

Refer to the key on REGISTRY INDEX SERIES and date of issue

Sheet 2 of 5 [Part of 1483]

NAIROBI COUNTY

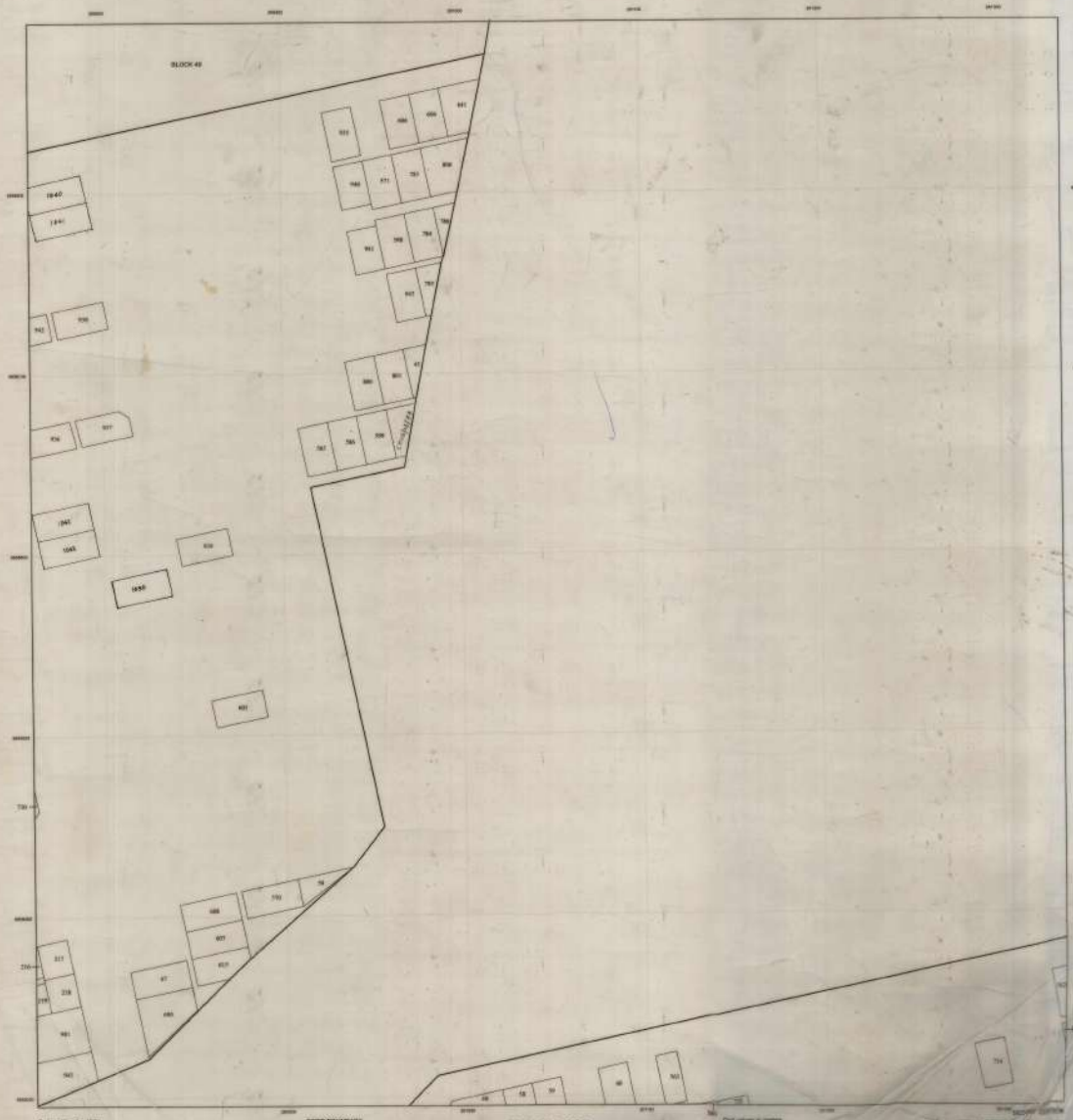

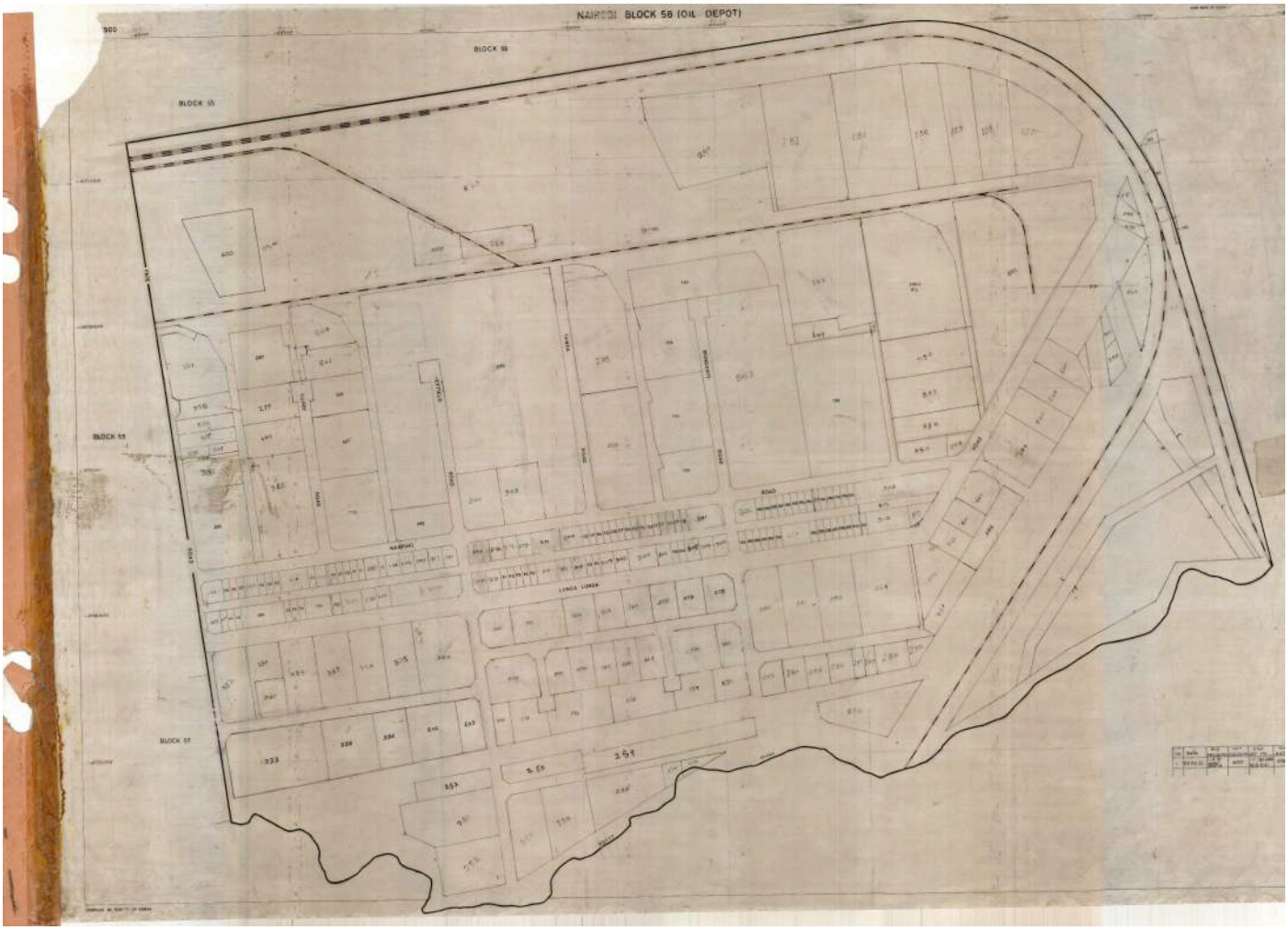
NAIROBI BLOCK 58 (OIL DEPOT)
BLOCK 55
BLOCK 56
BLOCK 57
ROAD
LONGA LONGA

SCALE 1:2500
NAIROBI - BLOCK 59 (LIKONI ROAD)
NAIROBI-BLOCK 59
BLOCK 56
BLOCK 54
BLOCK 58
BLOCK 71
BLOCK 97
BLOCK 93
SEE BLOCK 58
ROAD

NAIROBI COUNTY

NAIROBI BLOCK 63 (IMPALA)

Refer to this map as: REGISTRY INDEX SERIES
and date of issue: Sheet 3 of 3 [Part of 14]14]

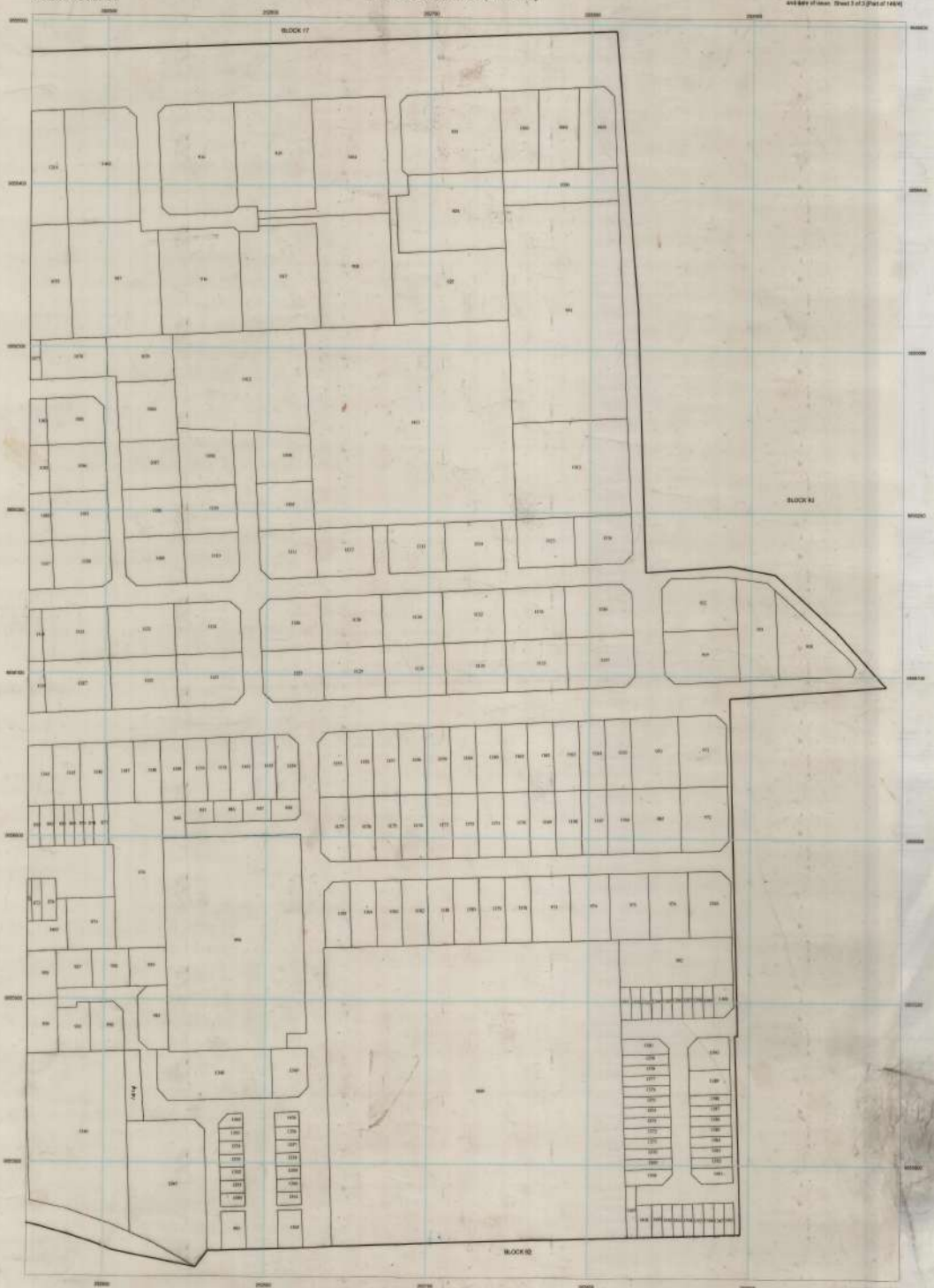

Datum: Nine Arc 1960
Projection: UTM Zone 37S
Published by Survey of Kenya April 2023

FIXED BOUNDARY

SCALE 1:1000

Grid values in metres

SECOND EDITION
Compiled by Survey of Kenya April 2023
Compiled from File 118/131,119/191,278/667, 17/175, 175/24, 116/131
(See Technical File)

No.	DATE	New arr.	Regd. arr.	PLAN REF. No.	REGISTRY No.	Name	Initials
1	18 OCT 2023	Lands Settlement: 2 Parks Settlement: 0 Roads: 0 Arts/Mess: 3		1/1/1/175/24 of 28 AUG 1996	14605	K.Kibet	

INDEX TO ADJOINING SHEETS

SCALE 1:2,500

NAIROBI - BLOCK 70 (LUSAKA ROAD)

NAIROBI-BLOCK 70

BLOCK 41

BLOCK 30

BLOCK 31

BLOCK 65

BLOCK 66

BLOCK 67

BLOCK 69

BLOCK 71

BUNYALA ROAD

SHORECLIFF ROAD

BARIMO ROAD

GIKUYU ROAD

LUSAKA ROAD

CHIOGORIA ROAD

MACHAKOS ROAD

BUNDOBI ROAD

DAGORETTI ROAD

WARWICK ROAD

CHIOGORIA ROAD

BANDARI ROAD

BUTERE ROAD

DAR ES SALAAM ROAD

CHURA ROAD

NAIROBI BLOCK 110 (MARURU)
SCALE 1:2,500
BLOCK 110

NAIROBI BLOCK 125 (IMARA DAIMA)

NAIROBI COUNTY

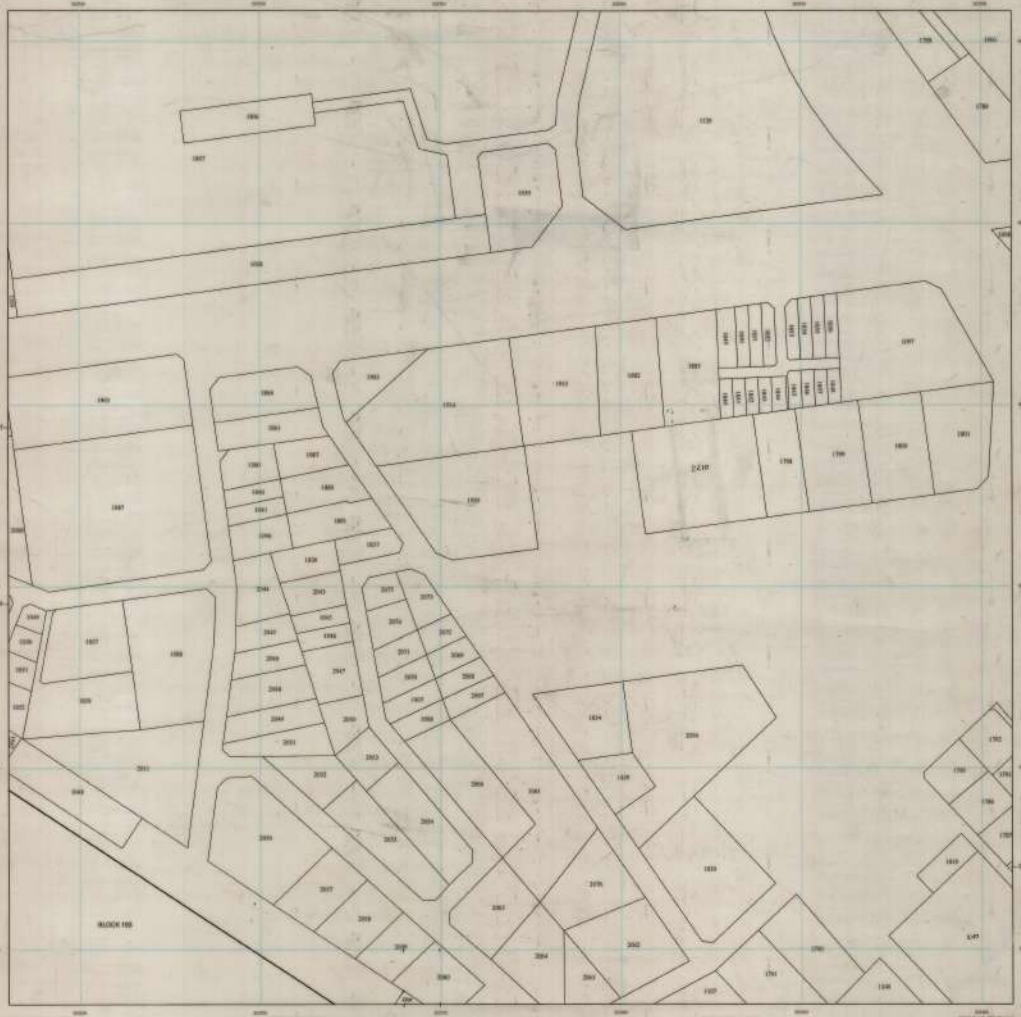

Datum: New Arc 1960

Projection: UTM Zone 37S

Published by Survey of Kenya, July 2020

FIXED BOUNDARY

SCALE 1:2500

Grid values in metres

NR	DATE	FILE PLAN NR	FILE NR ORIGINAL NR	FILE REF	PLAN NR	REMARKS
1.	11.12.2002	L.R. NR 209/2/2026	2069	CR 5.37(61)1.36 ref. 247/1	195/16	Parcels B.
2.	17.12.2002	L.R. NR 209/2/2.3	2068	CR 5.37(61)1.34 ref. 11.2000	196/16	Parcels B.
3.	17.12.2002	L.R. NR 209/2/2026	2066	CR 5.37(61)1.35 ref. 11.2000	198/16	Parcels B.
4.	17.12.2002	L.R. NR 209/2/2.4	2066	CR 5.37(61)1.38 ref. 11.2000	199/16	Parcels B.
5.	17.12.2002	L.R. NR 209/2/2.5	2065	CR 5.37(61)1.39 ref. 11.2000	197/16	Parcels B.

SECOND EDITION

Compiled by Survey of Kenya July, 2020

Compiled from File 170/173, 208/68, 224/115, 288/117, 42/405, 048/108(See Technical File)

INDEX TO ADJOINING SHEETS

Refer to the map at REGISTRY INDEX SERVICE and note all faults!

NAIROBI BLOCK 125 (IMARA DAIMA)

(Sheet 11 of 19 (Part of 14024))

NAIROBI COUNTY

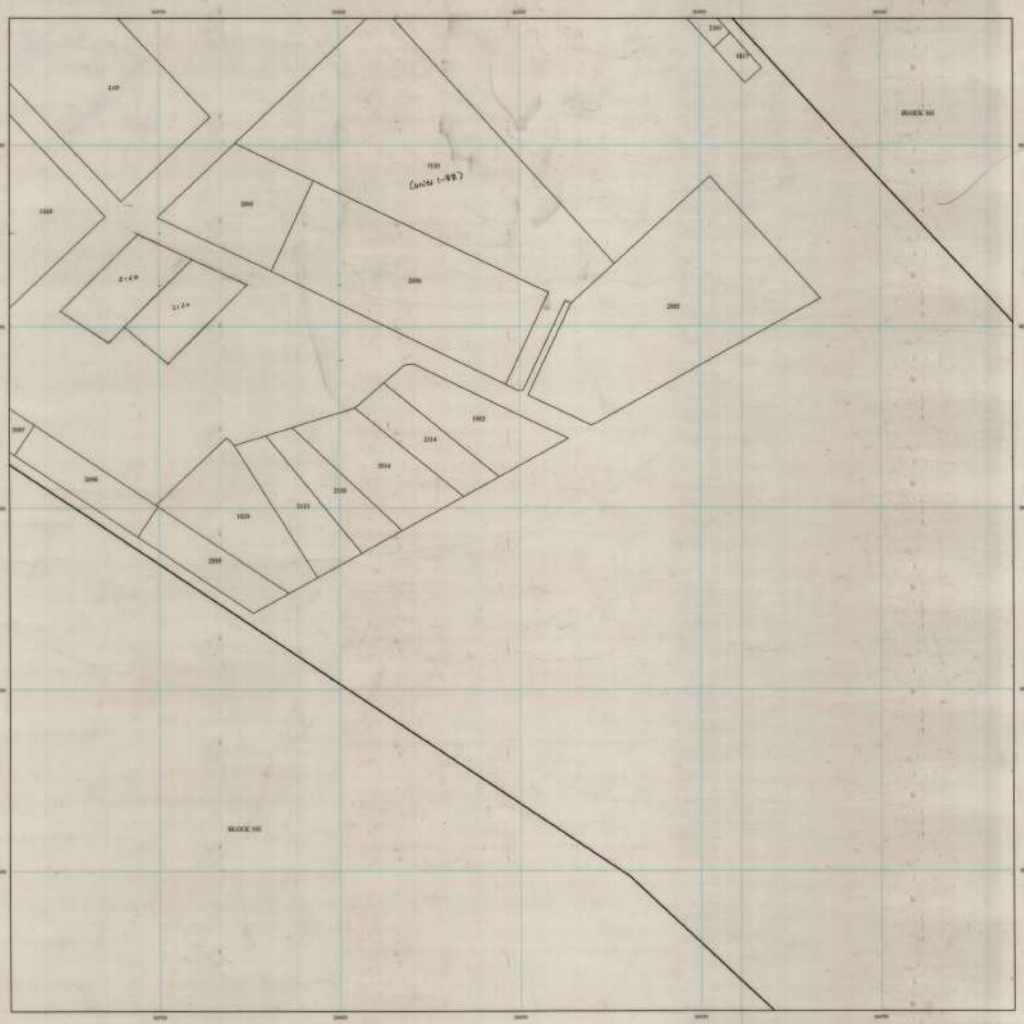

Datum: Arc 1960

Projection: UTM Zone 37S

Published by Survey of Kenya, July 2022

FIXED BOUNDARY

Grid values in metres

SCALE 1:2500

NO	DATE	OLD PARCEL NO	NEW PARCEL NO	FILE REF	SURVEY REF	CHIEF'S INITIALS
1	21-8-2014	C.E. ITEM 2015/2018-2018	2103-2106	CR 1251/21/197 of 21-12-2018	6068/2015	[illegible]
2	18-08-20	C.E. ITEM 2017/2-2018	2099	CR 1251/21/371 of 13-04-2018	2781/2012	[illegible]
3	12-11-22	C.E. ITEM 4293/4287	2085	CR 1251/21/[illegible] of 28-06-2019	6608/2	[illegible]
4	17-10-19	C.E. ITEM 2018/4/2-2021	1116 (units 1-88)	CR 1251/21/[illegible] of 15-08-2020	7867/2 2022/6-17	[illegible]
5	24-08-22	C.E. ITEM 2021/3477	2107	CR 1251/21/[illegible] of 11-08-2022	3441/10	[illegible]

SECOND EDITION

Compiled by Survey of Kenya July, 2022

Compiled from File 194/152,192/193, 427/9

KSR/R/2(Sw Technical File)

INDEX TO ADJOINING SHEETS

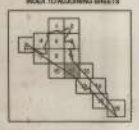

NAIROBI COUNTY

NAIROBI BLOCK 128 (DAGORETTI RUTHIMITU)

F.L.E 212

SCALE 1:2500

SHEET No 6

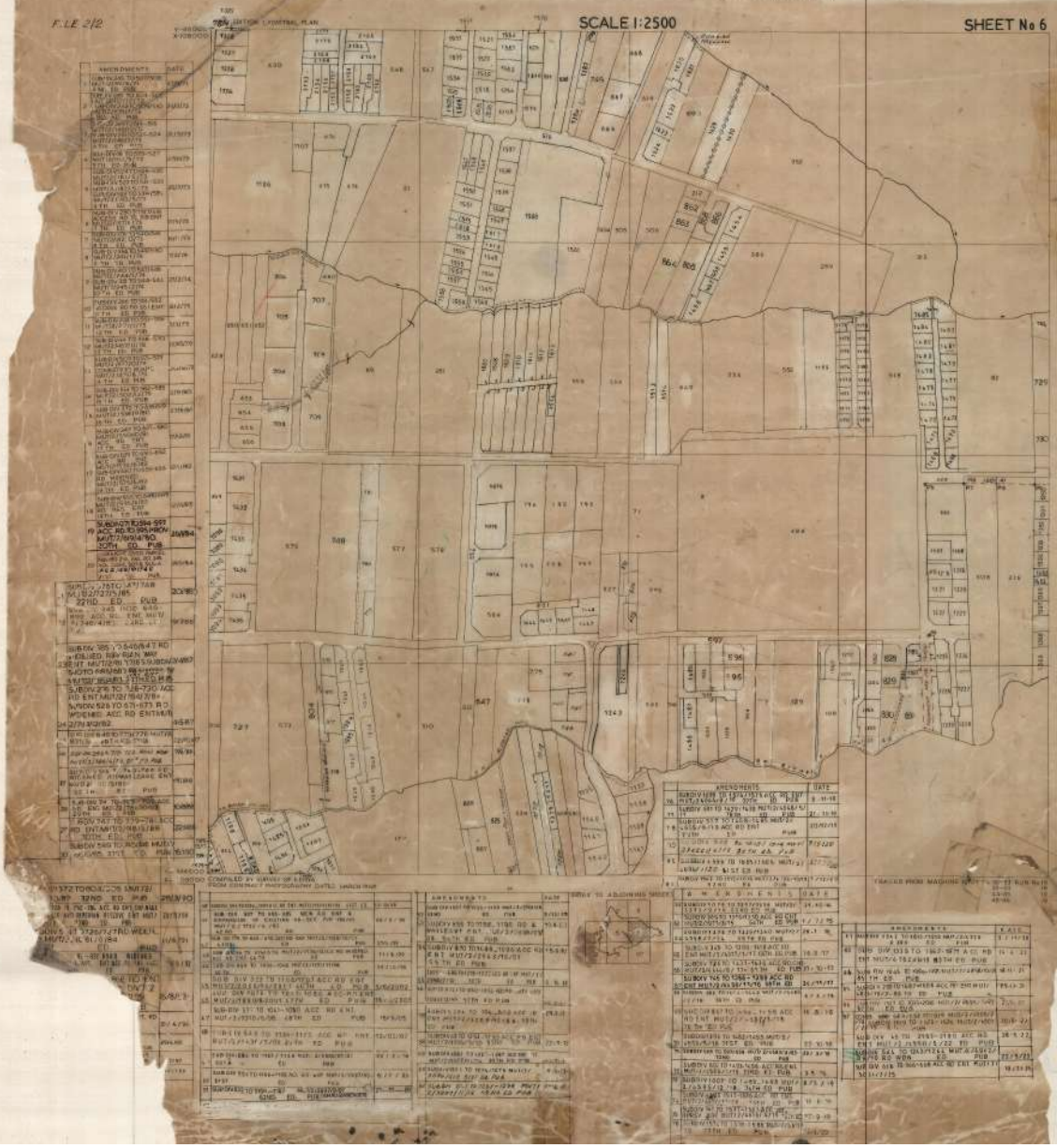

NAIROBI COUNTY

NAIROBI BLOCK 131(DAGORETTI UTHIRU)

SCALE 1:2500

SHEET No. 6

NAIROBI BLOCK 137 (KAREN)

Refer to this map as: REGISTRY INDEX SERIES
and date of issue:
Sheet 11 of 11 (Part of 148/0)

NAIROBI COUNTY

Datum: Arc 1960
Projection: UTM Zone 37S
Published by Survey of Kenya, September 2021

FIXED BOUNDARY

Grid values in metres

SCALE 1:2500

NO.	NAME	OLD PARCEL NO.	NEW PARCEL NO.	DELIV. SCALE	PLOTTED	CHECKED
1	[illegible]	[illegible]	1163	1:2500	[illegible]	[illegible]
2	R/7134	Boundary of Mbagathi		[illegible]	[illegible]	[illegible]

FIRST EDITION
Compiled by Survey of Kenya, September, 2021
Compiled from FRs. 4007, 1443, 20414, 43018B, 49018B, 102/181 (See Technical File)

INDEX TO ADJOINING SHEETS

NAIROBI BLOCK 137 (KAREN)

Refer to this map as: REGISTRY INDEX SERIES
and date of issue:
Sheet 3 of 11 (Part of 140/3)

NAIROBI COUNTY

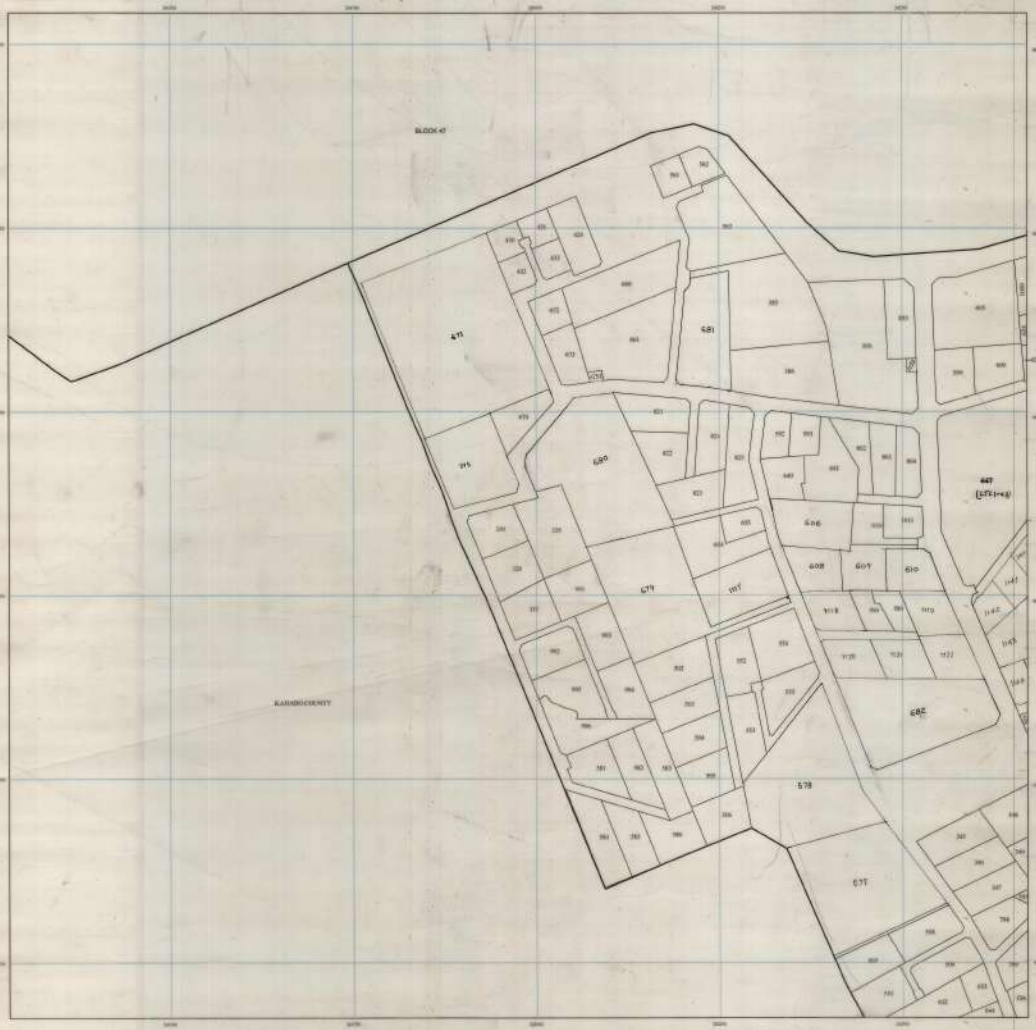

Datum: Arc 1960
Projection: UTM Zone 37S
Published by Survey of Kenya, September 2021

FIXED BOUNDARY

No	Date	[illegible]	[illegible]	File Ref. No	Plan No	Name
1	[illegible]	[illegible]	[illegible]	[illegible]	[illegible]	[illegible]
2.	[illegible]	[illegible]	[illegible]	[illegible]	[illegible]	[illegible]
3	[illegible]	[illegible]	[illegible]	[illegible]	[illegible]	[illegible]
4	[illegible]	[illegible]	[illegible]	[illegible]	[illegible]	[illegible]

SCALE 1:2500

Grid values in metres

FIRST EDITION
Compiled by Survey of Kenya, September 2021
Compiled from File 15544, 20218T, 35488, 48658, 55433, 36498 (See Technical File)

INDEX TO ADJOINING SHEETS

NAIROBI BLOCK 137 (KAREN)

Refer to this map as: REGISTRY INDEX SERIES
and date of issue:
Sheet 9 of 11 (Part of 1/N/3)

NAIROBI COUNTY

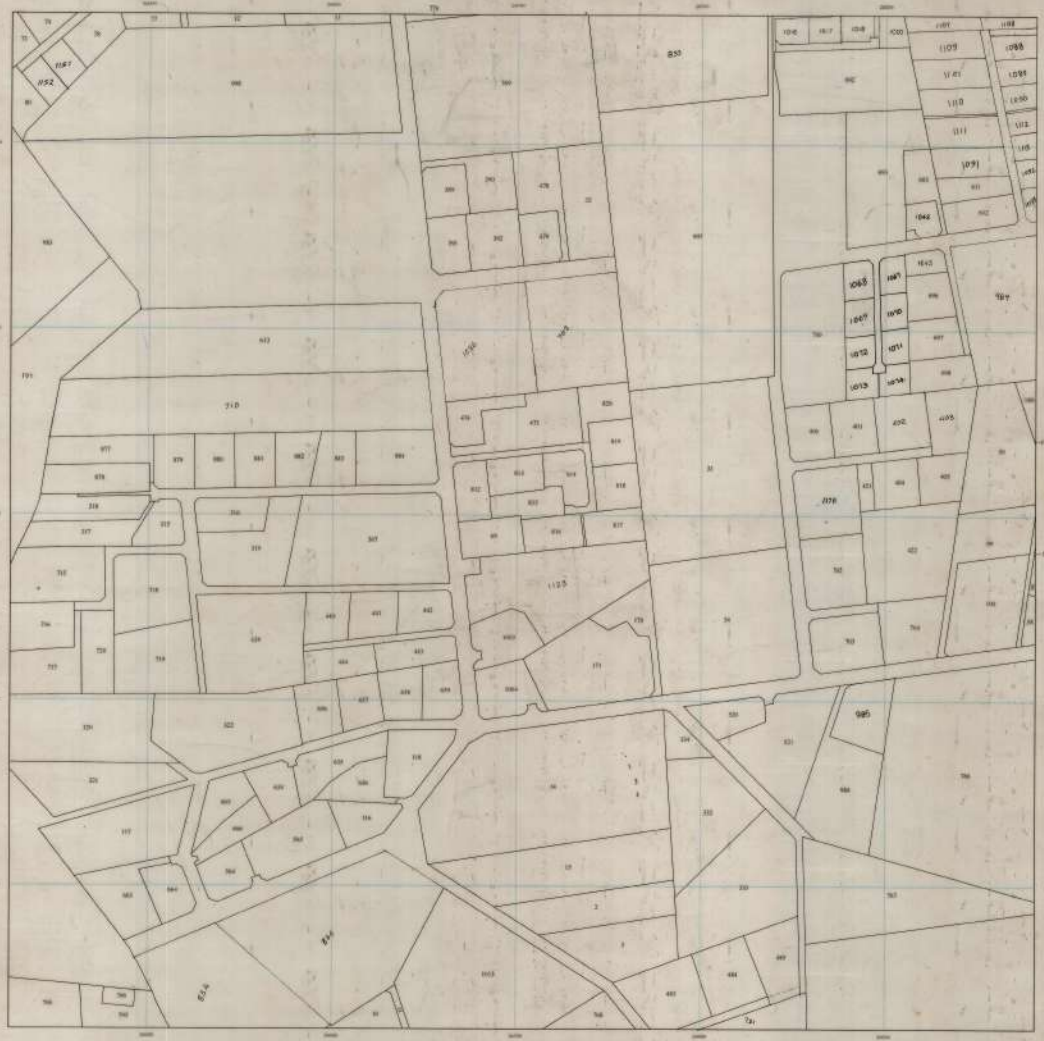

Datum: New Arc 1960

Projection: UTM Zone 37S

Published by Survey of Kenya, September 2021

FIXED BOUNDARY

NO	DATE	PLAN REF. NO.	FILE REF NO	PLAN REF.	DEFICIENCY TO ENTRY	CHK'D
1	17-01-2022	L.R. NO. 209/1/2/2/1-8	1083-1092	CO.CS/37/34 CO.20-03-24	658/31	MERAKI
2	18-03-2022	L.R. NO. 209/2/1/1/6	1093-1098	CO.CS/37/34 CO.18-01-24	644/6	NAPHELIA
3	5-04-2022	L.R. NO. 209/2/1/1-8	1099-1106	CO.CS/37/34 CO.20-03-24	459/102	[illegible]
4	22-05-2022	L.R. NO. 209/2/1/1/3 Amalgam. 209	1107-1113	CO.CS/37/34 CO.20-03-24	209/77	[illegible]
5	16-8-2022	L.R. NO. 11/41/2/2/108	1114-1124	CO.CS/37/34 CO.20-03-24	8/41/108	NAPHELIA
6	16-7-2022	L.R. NO. 209/2/1/1/1-8	1125	CO.CS/37/34 CO.20-03-24	209/1/1	[illegible]
7	15-01-2023	L.R. NO. 209/2/1/1/2	1126	CO.CS/37/34 CO.20-03-24	209/1/2	NAPHELIA

SCALE 1:2500

Grid values in metres

FIRST EDITION

Compiled by Survey of Kenya September 2021

Compiled from FRs 71/126,85/172,144/3,217/35,
331/95,438/156,548/145,652/158(See Technical File)

INDEX TO ADJOINING SHEETS

NAIROBI BLOCK 143 (SHEET 1)

SCALE 1:2500

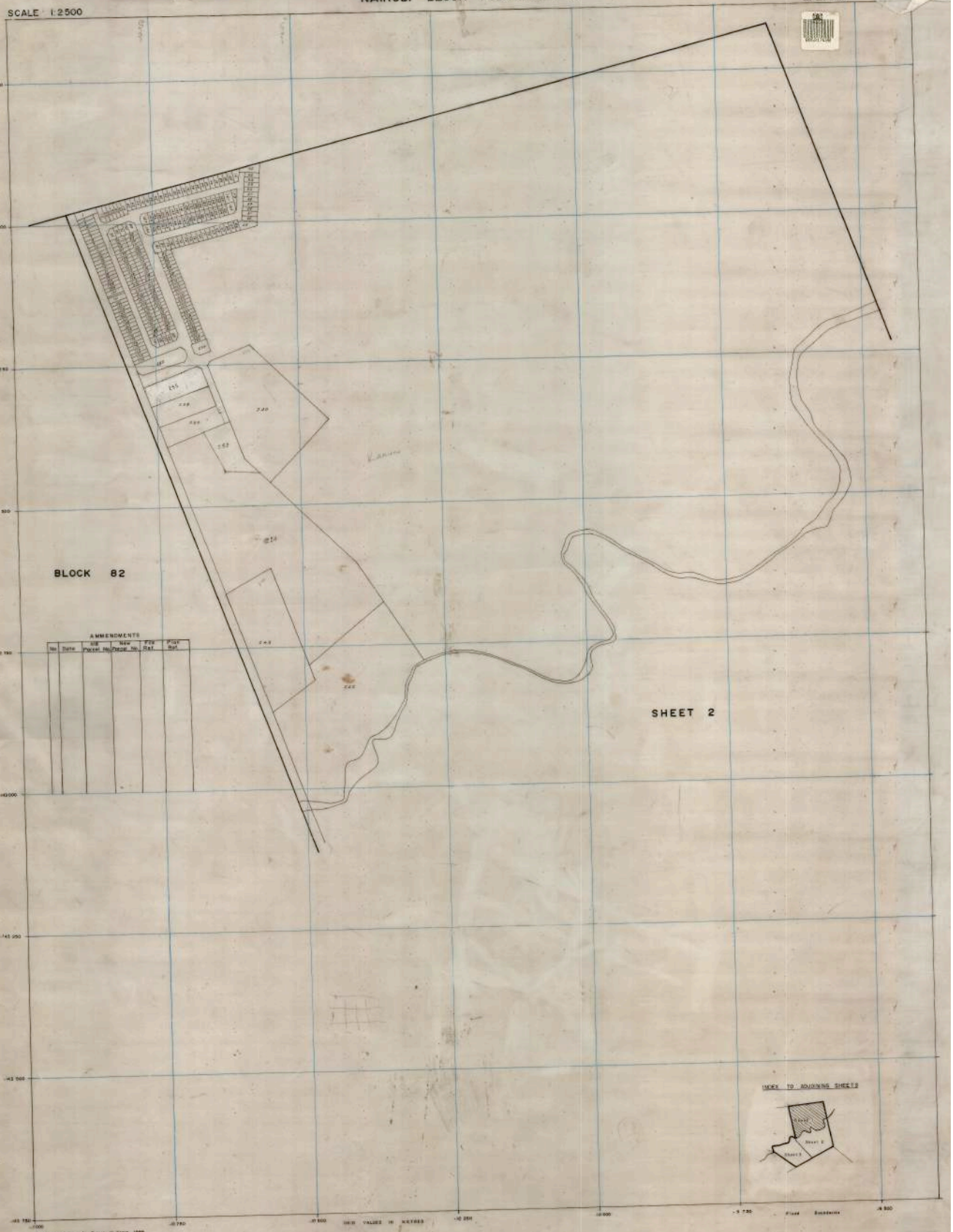

NAIROBI BLOCK 148 (GALLERIA)

Refer to this map as: REGISTRY INDEX SERIES
and date of issue
Sheet 5 of 14 (Part of 148/3)

NAIROBI COUNTY

Datum: New Arc 1960
Projection: UTM Zone 37S
Published by Survey of Kenya, March 2022

FIXED BOUNDARY

Old views in notes

SECOND EDITION
Compiled by Survey of Kenya, March, 2022.
Compiled from File 85/170, 150/184, 338/76, 32138, 32137, 33602, 478/158, 59240 (See Technical File)

SCALE 1:2500

No	DATE	SUB DIVISION No.	NEW PARTICULARS	FILE REF	PLAN REF	SIGNATURE
1	[illegible]	[illegible]	[illegible]	[illegible]	[illegible]	[illegible]
2	[illegible]	[illegible]	[illegible]	[illegible]	[illegible]	[illegible]
3	17.6.22	9.5	2092-2093	[illegible]	696/23	[illegible]
4	[illegible]	[illegible]	2094-2095	[illegible]	696/23	[illegible]
5	[illegible]	[illegible]	2096-2097	[illegible]	696/23	[illegible]
6	[illegible]	1-6 NO DIVISION	2098-2101	CREATION IN 32.24 & CONT	466/24	[illegible]

INDEX TO ADJOINING SHEETS

NAIROBI BLOCK 148 (GALLERIA)

NAIROBI COUNTY

FIXED BOUNDARY

SCALE 1:2500

SECOND EDITION

INDEX TO ADJOINING SHEETS

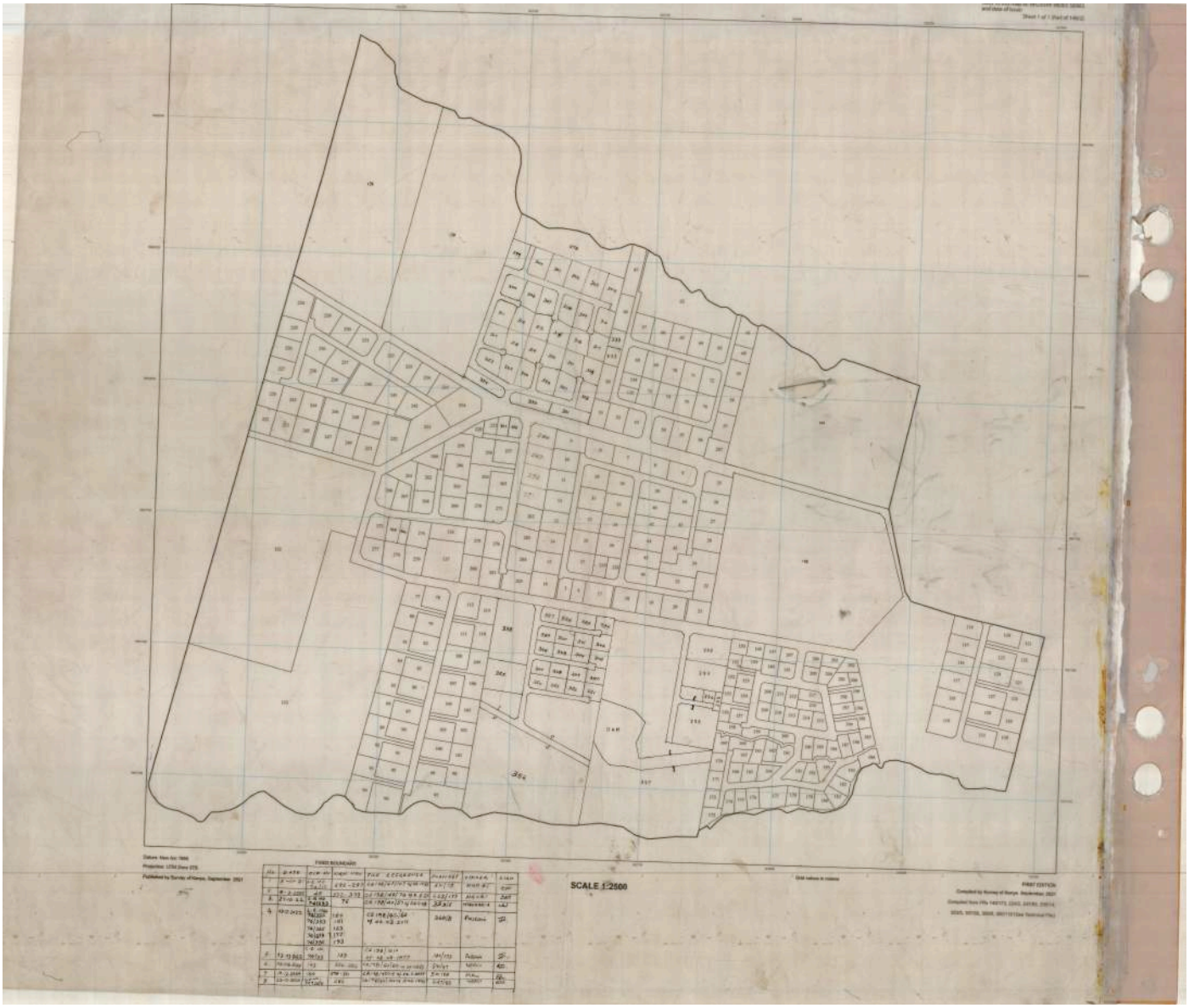
SCALE 1:2500

NAIROBI BLOCK 192 (KAREN HARDY)

Refer to File map as: REGISTRY INDEX SERIES
and date of issue:
Sheet 2 of 2 (Part of 149/3)

NAIROBI COUNTY

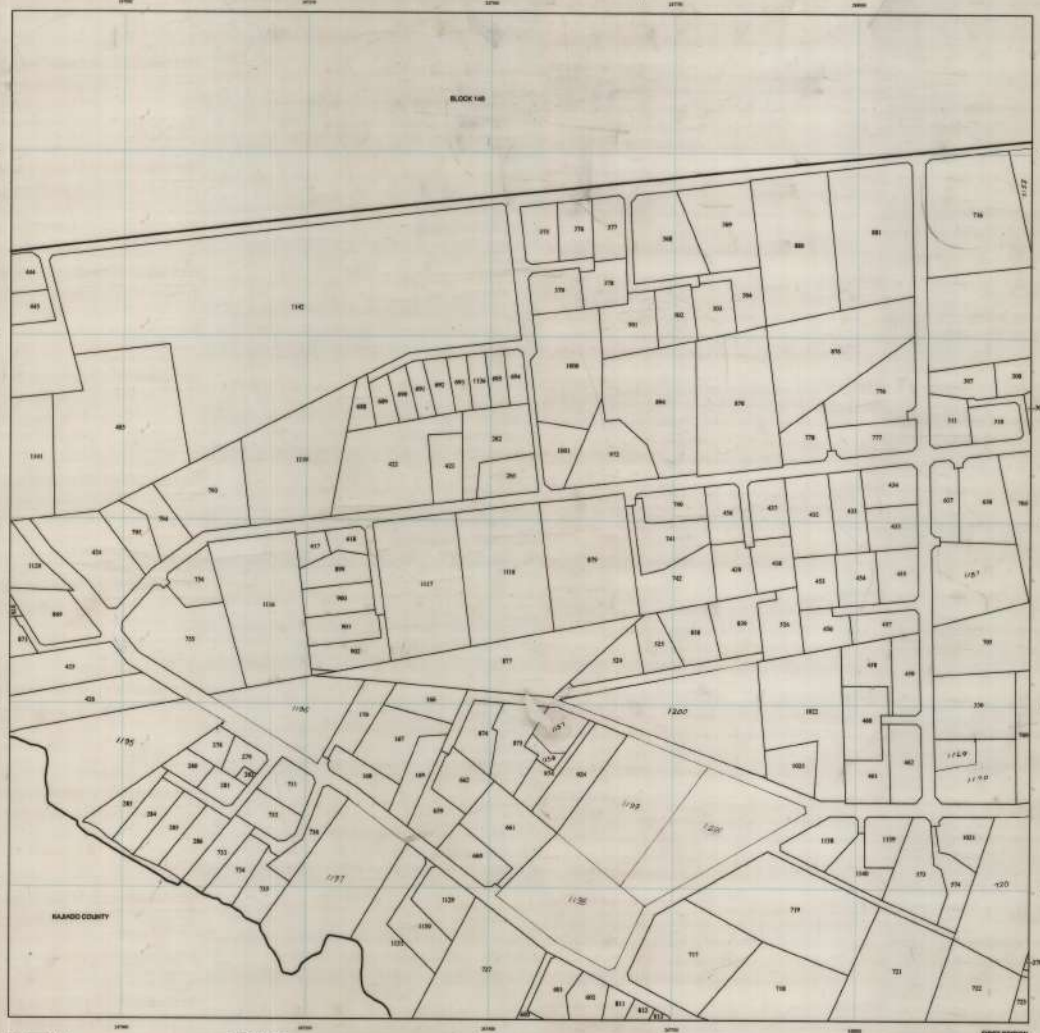

Datum: Near Arc 1960
Projection: UTM Zone 37S
Published by Survey of Kenya, December 2021

FIXED BOUNDARY

SCALE 1:2500

Grid values in meters

NO	DATE	CLASS	NATURE	FILE REF.	PLAN REF.	NAME	SIGN
1	[illegible]	[illegible]	[illegible]	[illegible]	[illegible]	[illegible]	[illegible]
2	[illegible]	[illegible]	[illegible]	[illegible]	[illegible]	[illegible]	[illegible]
3	[illegible]	[illegible]	[illegible]	[illegible]	[illegible]	[illegible]	[illegible]

FIRST EDITION
Compiled by Survey of Kenya December, 2021
Compiled from 67/32, 154/113, 37/215B, 37B/20, 436/196, 534/154, 558/95(See Technical File)

INDEX TO ADJOINING SHEETS

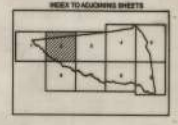

NAIROBI BLOCK 192 (KAREN HARDY)

Refer to this map as: REGISTRY INDEX SERIES and date of issue

Sheet 3 of 9 (Part of 149/3)

NAIROBI COUNTY

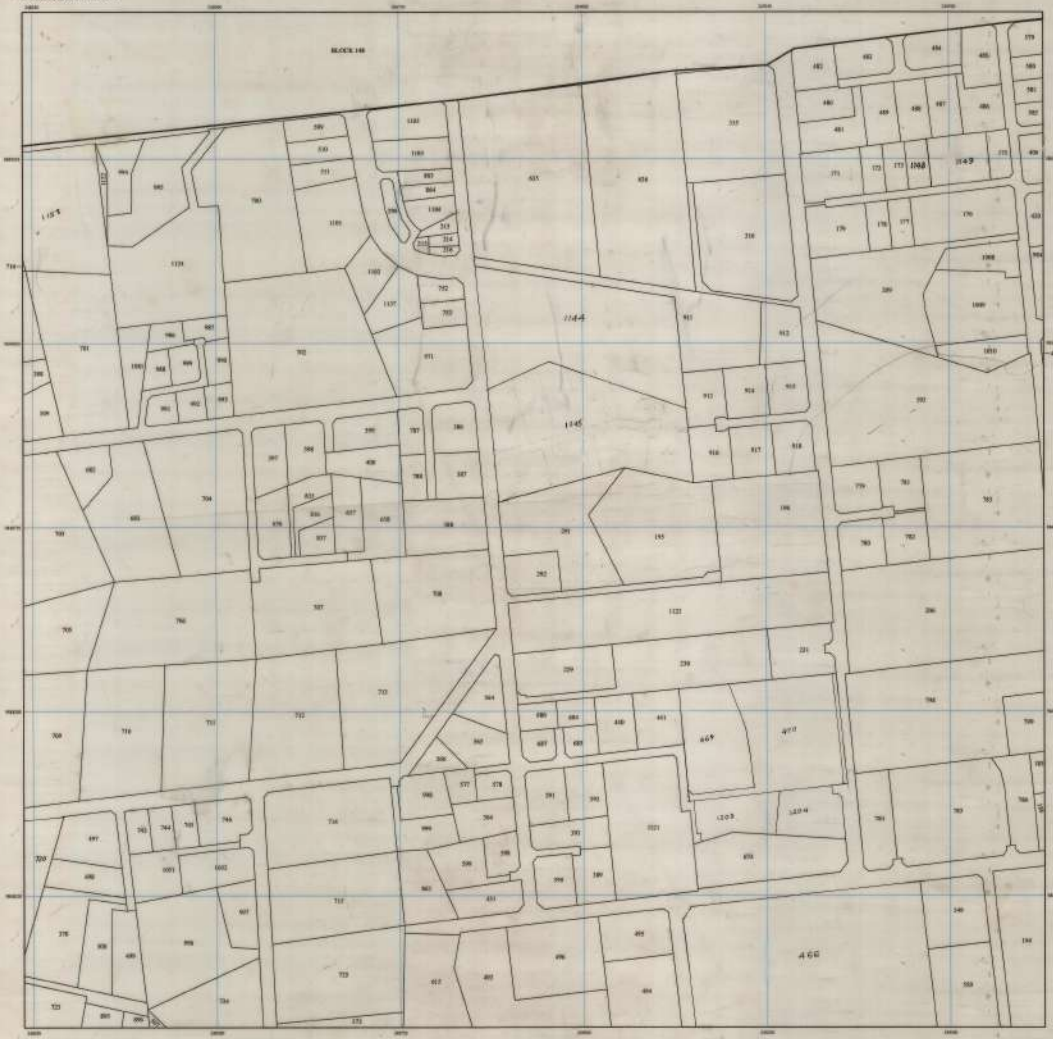

Datum: Nav Arc 1950

Projection: UTM Zone 37S

Published by Survey of Kenya, December 2021

FIXED BOUNDARY

Grid values in meters

SCALE 1:2500

No	DATE	OLD PARCEL No	NEW PARCEL No	FILE REF	PLAN REF	NAME & PLAN
1	16.10.18	170	1148-149	CR 53/1/183 01.10.12.2006	186/125	[illegible]
2	28.10.24	1148/1149	1148-149	CR 53/1/183		[illegible]
3	28.10.24	1148/1149	1148-149	CR 53/1/183	203/125	[illegible]
4	28.10.24	1148/1149	1148-149	CR 53/1/183		[illegible]
5	28.10.24	1148/1149	1148-149	CR 53/1/183	433/143	[illegible]
6	28.10.24	1148/1149	1148-149	CR 53/1/183		[illegible]
7	28.10.24	1148/1149	1148-149	CR 53/1/183		[illegible]
8	28.10.24	1148/1149	1148-149	CR 53/1/183		[illegible]
9	28.10.24	1148/1149	1148-149	CR 53/1/183		[illegible]
10	28.10.24	1148/1149	1148-149	CR 53/1/183		[illegible]
11	28.10.24	1148/1149	1148-149	CR 53/1/183		[illegible]
12	28.10.24	1148/1149	1148-149	CR 53/1/183		[illegible]
13	28.10.24	1148/1149	1148-149	CR 53/1/183		[illegible]
14	28.10.24	1148/1149	1148-149	CR 53/1/183		[illegible]
15	28.10.24	1148/1149	1148-149	CR 53/1/183		[illegible]
16	28.10.24	1148/1149	1148-149	CR 53/1/183		[illegible]
17	28.10.24	1148/1149	1148-149	CR 53/1/183		[illegible]
18	28.10.24	1148/1149	1148-149	CR 53/1/183		[illegible]
19	28.10.24	1148/1149	1148-149	CR 53/1/183		[illegible]
20	28.10.24	1148/1149	1148-149	CR 53/1/183		[illegible]

FIRST EDITION

Compiled by Survey of Kenya December, 2021

Compiled from 89/161, 89/141, 153/74, 254/86, 35/150, 482/119, 92/183, 400/116(See Technical File)

INDEX TO ADJOINING SHEETS

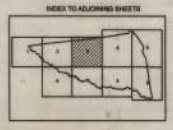

NAIROBI BLOCK 197 (NYARI)

Refer to this map as: REGISTRY INDEX SERIES
and date of issue

Sheet 6 of 6 (Part of 146/2)

NAIROBI COUNTY

Datum: New Arc 1960
Projection: UTM Zone 37S
Published by Survey of Kenya, September 2001

FIXED BOUNDARY

pn	SURVEY	PLAN NO.	PLAN PARCEL NO.	PLAN	PLAN REF.	PLAN MAP	CHANGE OF STATUS
1	78-10-21	L.R. 69 TRACINGS	516-514	—	C.T. 75/85/A/1 AT 28-10-42	2001/3	M.R. 146/2
4	94-08-29	C.S. 7/10 (SEE ALSO RULE DIAGRAM)	516	—	1993/10/13 TO 26-7-28	2001/3	146/2

SCALE 1:2500

Grid values in metres

FIRST EDITION
Compiled by Survey of Kenya, September, 2001
Compiled from File 95/59, 170/190, 210/17, 200/32,
95/59, 124/155 (See Technical File)

INDEX TO ADJOINING SHEETS

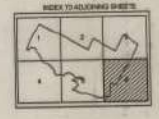

NAIROBI BLOCK 199 (GACHIE)

Refer to this map as: REGISTRY INDEX SERIES
and date of issue

Sheet 3 of 3 [Part of 148/1]

NAIROBI COUNTY



Datum: New Arc 1960
Projection: UTM Zone 37S
Published by Survey of Kenya, October 2021

SCALE 1:2500

FIRST EDITION
Compiled by Survey of Kenya, October, 2021
Compiled from FRs 6043, 128/36, 202/143,
[illegible] (See Technical File)

INDEX TO ADJOINING SHEETS

Refer to this map as: REGISTRY INDEX SERIES
and date of issue

Sheet 1 of 8 (Part of 148/4)

NAIROBI BLOCK 206 (MIHANGO)

NAIROBI COUNTY

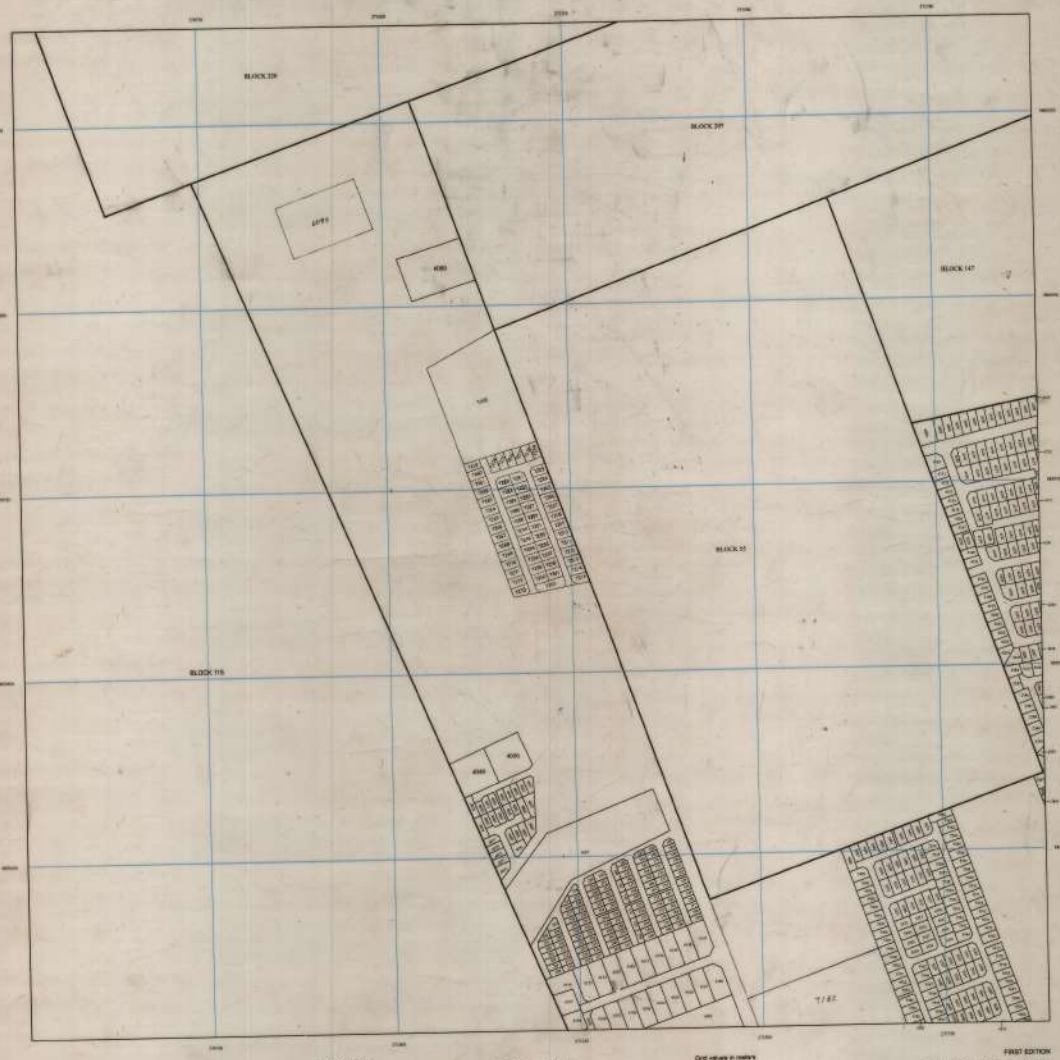

Datum: New Arc 1960
Projection: UTM Zone 37S
Published by Survey of Kenya, January 2022

FIXED BOUNDARY

SCALE 1:2500

Grid values in metres

NO	DATE	PARCEL NO	NEW PARCEL NO	FILE REF	PLAN REF	AREA & SUBJ
1.	27.09.23	10401/49-100	4049-4108	LR 209/17419	232/116	Subdivision 2
2.	19.9.24	10401/74	7180	LR 209/241	183/84	Subdivision 2
3.	15.04.25	10401/71	7200-7210	LR 209/241 LR 209/17419 LR 209/17420	479/84	Amalgamation

FIRST EDITION
Compiled by Survey of Kenya January 2022
Compiled from FRs 18340, 222/118, 245/95, 42/11-2, 447/12-14(See Technical File)

INDEX TO ADJOINING SHEETS

NAIROBI BLOCK 206 (MIHANGO)

Refer to this map as: REGISTRY INDEX SERIES and date of issue

Sheet 4 of 6 (Part of 14884)

NAIROBI COUNTY

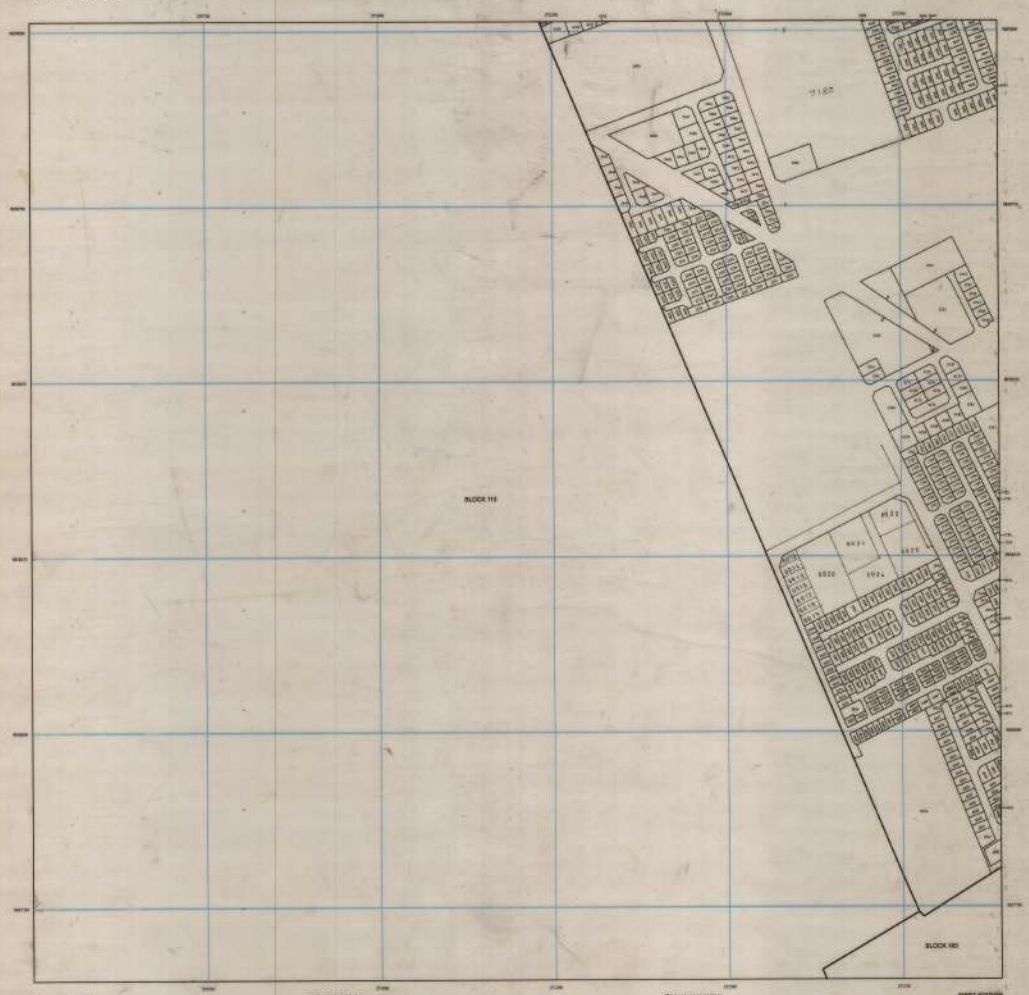

Datum: New Arc 1960
Projection: UTM Zone 37S
Published by Survey of Kenya, January 2020

FIXED BOUNDARY

SCALE 1:2500

Grid values in metres

No	Date	Ref No	New	Map	File	Details	Plan Ref	Action
7	[illegible]	[illegible]	4916-4920		[illegible]	[illegible]	[illegible]	[illegible]
5	[illegible]	[illegible]	[illegible]	[illegible]	[illegible]	[illegible]	[illegible]	[illegible]
6	[illegible]	[illegible]	[illegible]	[illegible]	[illegible]	[illegible]	[illegible]	[illegible]

FIRST EDITION
Compiled by Survey of Kenya January 2020
Compiled from File 16846, 32011/0, 4094, 4215, 47356, 049/170, 059/180(Bw Technical File)

INDEX TO ADJOINING SHEETS

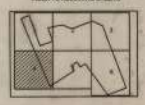

NAIROBI BLOCK 207 (MIHANGO)

Refer to this map as: REGISTRY INDEX SERIES
and date of issue:
Sheet 3 of 3 (Part of 148/4)

NAIROBI COUNTY

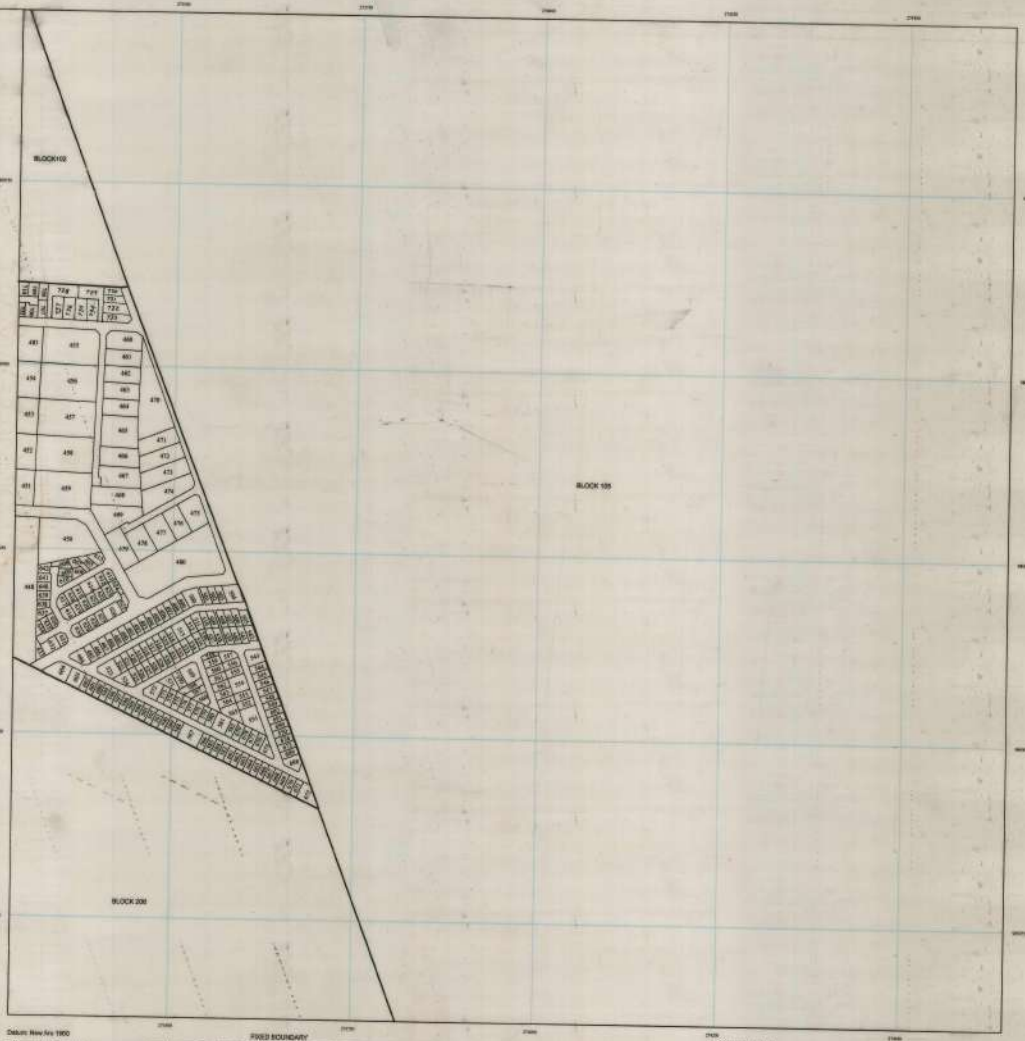

Datum: New Arc 1960
Projection: UTM Zone 37S
Published by Survey of Kenya, September 2021

FIXED BOUNDARY

SE	DATE	FILE PARCEL	NEW PARCEL	FILE REFERENCE	PLAN REF	NAME	SIGN
1	02.06.23	[illegible]	[illegible]	[illegible]	227/38	[illegible]	[illegible]

SCALE 1:2500

Grid values in metres

FIRST EDITION
Compiled by Survey of Kenya, September, 2021
Compiled from File 32/130,41180, 4302/2,4424,
[illegible]/ 99/17,80001(See Technical File)

INDEX TO ADJOINING SHEETS

NAIROBI BLOCK 229 (TWO RIVERS)

Refer to this map as REGISTRY INDEX SHEET and date of issue

Sheet 2 of 9 [Part of 14/R2]

NAIROBI COUNTY

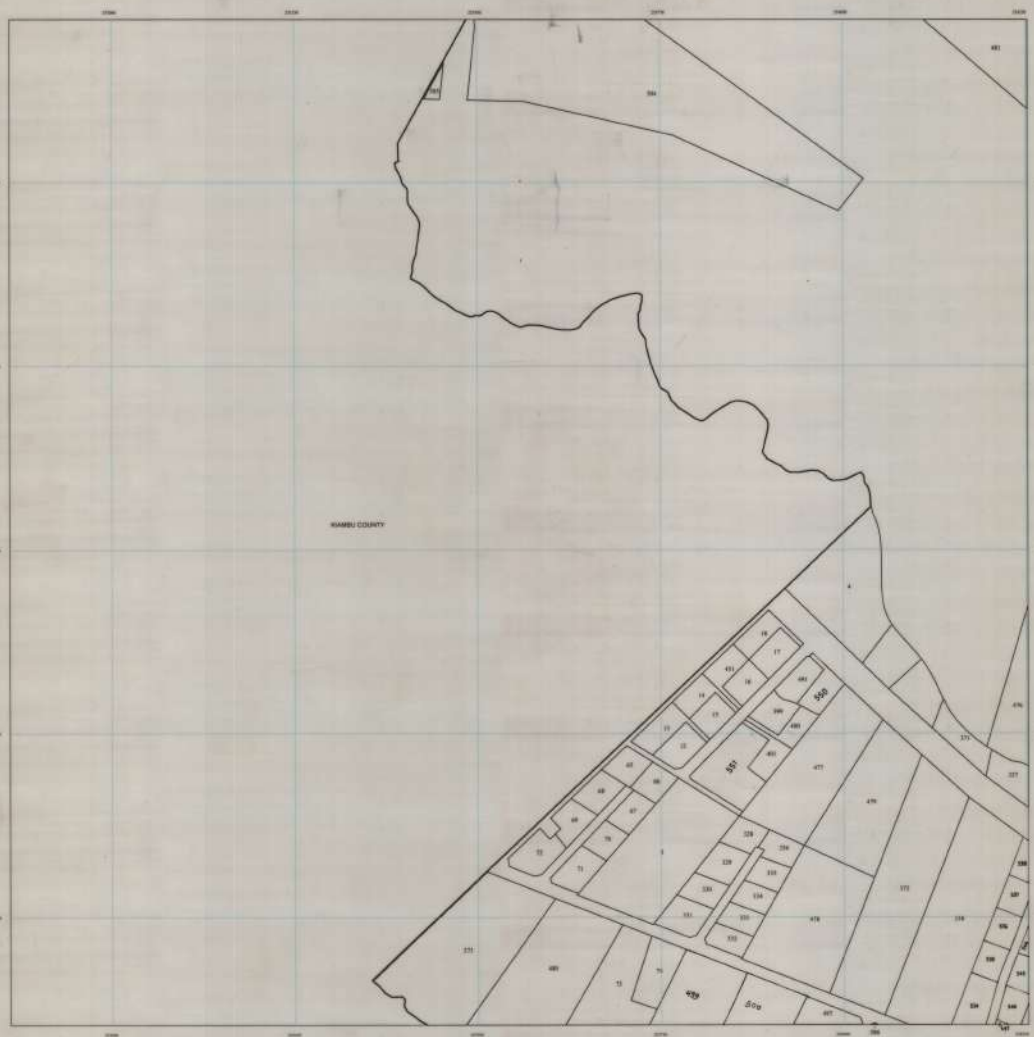

Datum: Mew Arc 1960

Projection: UTM Zone 37S

Published by Survey of Kenya, November 2021

NO	DATE	PLAN NUMBER NO	REF DRAWING NO	FILE REF	PAGE REF	NAME	SIGN
2	22-6-2020	6/2/-SPK	.001	CR.21.2/1/(6) 27.02.20	6x4/01	Sawe	[illegible]
1	22-6-2020	4/2	.001	CR.24.1/1/(6) 27.02.20	6x4/02	Sawe	[illegible]

FIXED BOUNDARY

SCALE 1:2500

Grid values in meters

FIRST EDITION

Compiled by Survey of Kenya November, 2021

Compiled from FRs 5196,11875,24049,38749,

44047,63411,0 (See Technical File)

INDEX TO ADJOINING SHEETS

NAIROBI BLOCK 229 (TWO RIVERS)

Refer to this map as: REGISTRY INDEX SERIES
and date of issue

Sheet 3 of 6 (Part of 146/2)

NAIROBI COUNTY

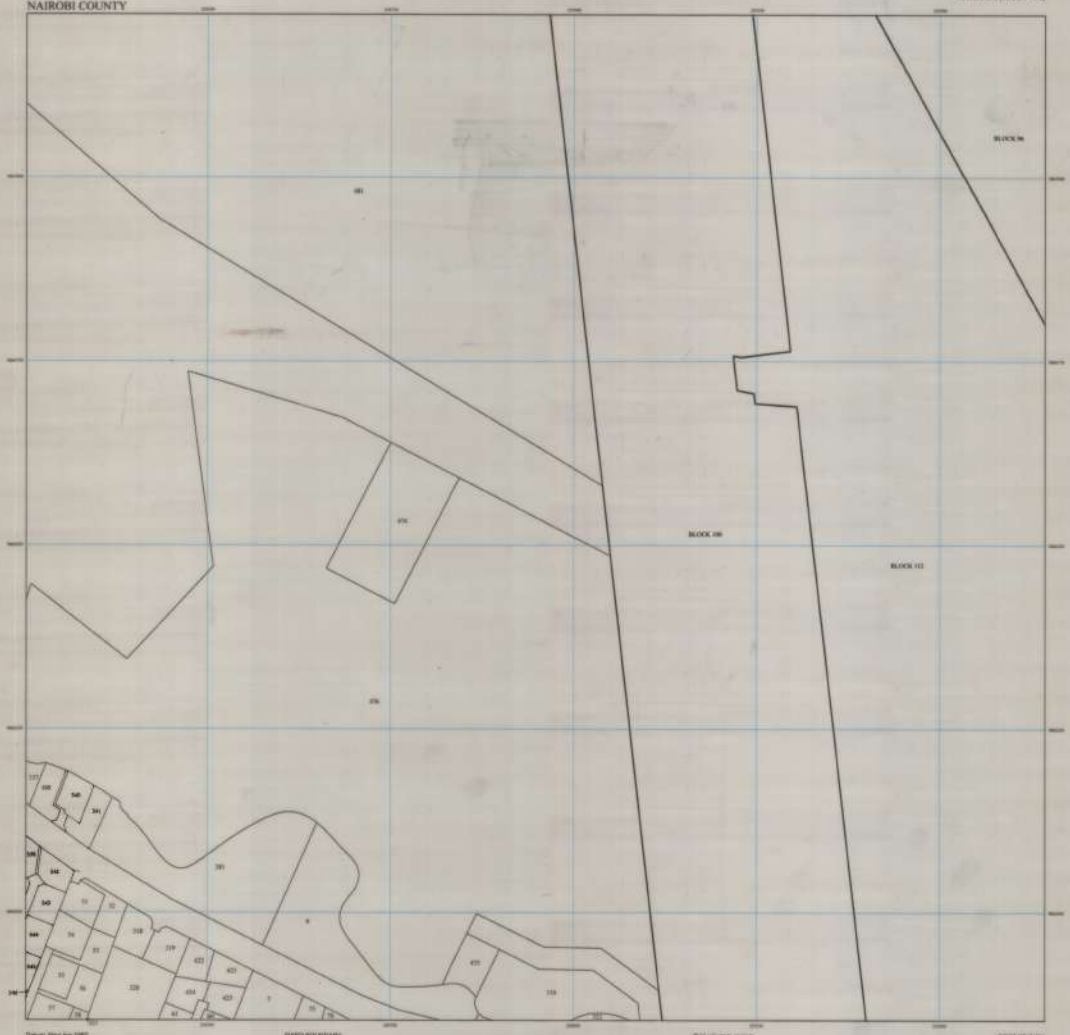

Datum: New Arc 1960
Projection: UTM Zone 37S
Published by Survey of Kenya, November 2021

FIXED BOUNDARY

SCALE 1:2500

Grid values in meters

FIRST EDITION
Compiled by Survey of Kenya November, 2021
Compiled from FRs 61/67, 122/177, 216/61,
39/177, 468/133, 942/139 (See Technical File)

INDEX TO ADJOINING SHEETS

NAIROBI BLOCK 263 (KWA NJENGA)

Refer to this map as: REGISTRY INDEX SERIES
and date of issue:

Sheet 3 of 6 (Part of 14&16)

NAIROBI COUNTY

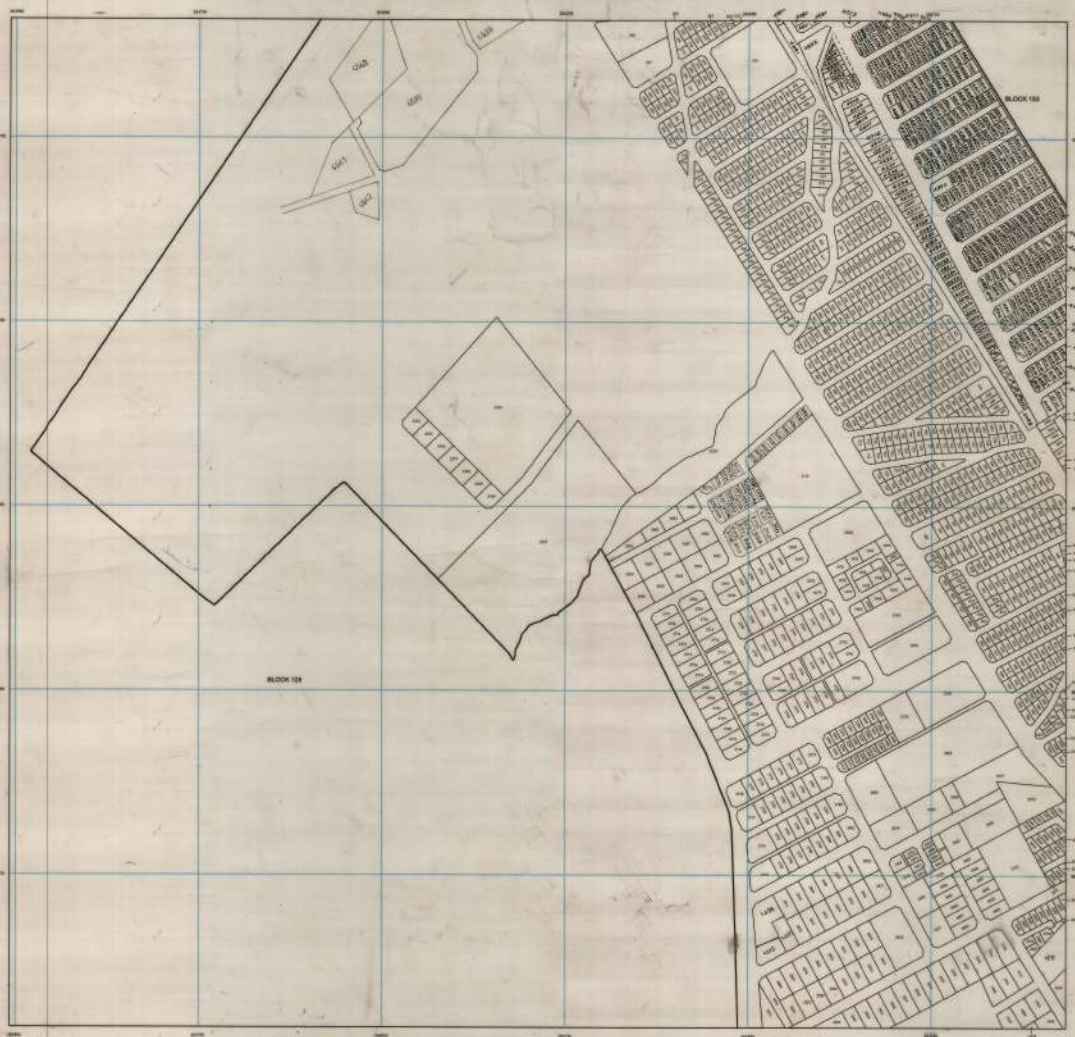

Datum: New Arc 1960

Projection: UTM Zone 37S

Published by Survey of Kenya, November 2021

No.	DATE	OLD No.	NEW PARCEL	FILE	SCP	FR No.
1	[illegible]	[illegible]	[illegible]	[illegible]	[illegible]	[illegible]
2	[illegible]	[illegible]	[illegible]	[illegible]	[illegible]	[illegible]
3	[illegible]	[illegible]	[illegible]	[illegible]	[illegible]	[illegible]
4	[illegible]	[illegible]	[illegible]	[illegible]	[illegible]	[illegible]
5	[illegible]	[illegible]	[illegible]	[illegible]	[illegible]	[illegible]
6	[illegible]	[illegible]	[illegible]	[illegible]	[illegible]	[illegible]
7	[illegible]	[illegible]	[illegible]	[illegible]	[illegible]	[illegible]

FIXED BOUNDARY

SCALE 1:2500

Grid values in metres

FIRST EDITION

Compiled by Survey of Kenya, November, 2021

Compiled from [illegible] Technical Plan

INDEX TO ADJOINING SHEETS

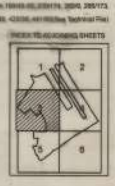

NAIROBI BLOCK 263 (KWA NJENGA)

Refer to this map as: REGISTRY INDEX SERIES and date of issue

Sheet 4 of 9 (Part of 16/4)

NAIROBI COUNTY

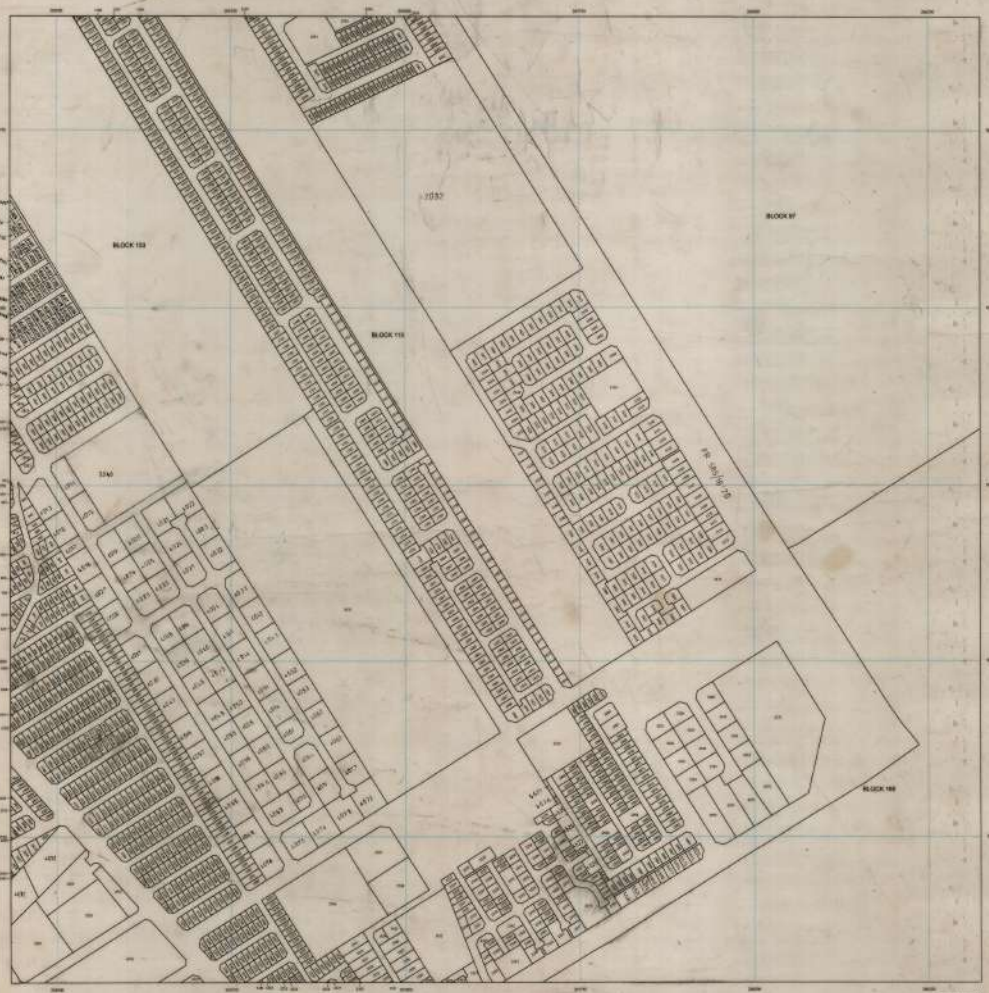

Datum: New Arc 1960

Projection: UTM Zone 37S

Published by Survey of Kenya, November 2021

FIXED BOUNDARY

SCALE 1:2500

FIRST EDITION

Compiled by Survey of Kenya November 2021

Compiled from 17197, 19750-82, 232/103, 31702, 33769,34110,409/34 (See Technical File)

INDEX TO ADJOINING SHEETS

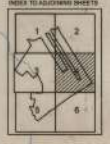

No.	DATE	OLD No.	NEW No.	FR No.	FILE REF.
1	[illegible]	[illegible]	[illegible]	[illegible]	[illegible]
2	[illegible]	[illegible]	1991	[illegible]	[illegible]
3	[illegible]	[illegible]	3201	[illegible]	[illegible]
4	[illegible]	[illegible]	[illegible]	[illegible]	[illegible]
5	[illegible]	[illegible]	2043	[illegible]	[illegible]
6	[illegible]	2001 2300 2301 2304	3923	[illegible]	[illegible]
7	[illegible]	[illegible]	[illegible]	[illegible]	[illegible]
8	[illegible]	[illegible]	[illegible]	[illegible]	[illegible]
9	[illegible]	—	[illegible] (Stude)	[illegible]	[illegible]